All you need to know about Data Visualization

Alexis Carbillet

August 3rd 2023

Contents

Foreword **iii**

Introduction **v**

1 Hierarchical **1**
1.1 Cluster dendograms 2
1.2 Organizational charts 4
1.3 Sunburst chart 7
1.4 Tree diagram 9
1.5 Treemaps 12
1.6 Comparison 14

2 Temporal **17**
2.1 line chart 18
2.2 area chart 20
2.3 Candlestick chart 23
2.4 Gantt chart 26
2.5 Heatmaps 29
2.6 Comparison 31

3 Distribution **33**
3.1 Violin 34
3.2 Density 36
3.3 Histogram 38
3.4 Boxplot 40
3.5 Ridgeline 42
3.6 Comparison 44

4 Ranking **47**
4.1 Bar charts 48
4.2 Lollipop 50
4.3 Wordcloud 52
4.4 Radar 54
4.5 Comparison 57

5 Spatial **59**
5.1 Choropleth maps 60
5.2 Bubble maps 62
5.3 Heatmaps 65
5.4 Flow maps 67
5.5 Comparison 69

6 Correlation **71**
6.1 Scatter plots 72
6.2 Correlation matrices 74
6.3 Parallel coordinate plots 76
6.4 Sankey diagrams 78
6.5 Force-directed graphs 80
6.6 Comparison 83

7 To go further **85**
7.1 load_iris study 85
7.2 Good practices 88
7.3 Usage of colors 90
7.4 3D visualization 94

8 Conclusion **97**

9 About the author **99**

Foreword

How to show your data efficiently? How to represent the reality to its closest? One wrong step and the data could be misinterpreted, leading to huge cost for the company when making important choices. Data visualization is not something you should take lightly.

It contains many examples of code written in Python. Some basics about this programming language will be needed if you want to be able to understand them.

Introduction

In an era defined by data, we find ourselves surrounded by a seemingly infinite sea of information. It flows through our lives, from the spreadsheets of business analysts to the charts and graphs that adorn news reports. Data is the foundation upon which we make decisions, shape policies, and gain understanding. But in this deluge of numbers and statistics, there is a vital bridge between raw data and meaningful comprehension—data visualization.

Imagine looking at a spreadsheet with thousands of rows and columns, each cell containing numbers, and trying to extract insights from this labyrinthine data maze. Now, picture the same information transformed into a vibrant, interactive graph or an elegant infographic. Suddenly, patterns emerge, trends become clear, and stories hidden in the numbers leap off the page. That's the power of data visualization.

In the pages that follow, we will explore the principles, tools, and techniques that transform data into visual narratives. We will delve into the psychology behind effective visualization, understanding how the human brain processes information and how we can harness this knowledge to communicate more effectively.

From bar charts and scatterplots to heatmaps and network diagrams, you'll discover the full spectrum of visualization possibilities and when to use them.

Moreover, in an age of data-driven decision-making, data literacy is a skill that empowers individuals and organizations alike. This book will equip you with the knowledge and confidence to not only interpret visualizations but also create your own, enabling you to make more informed choices, tell compelling data-driven stories, and unlock the potential of data to drive positive change.

So, if you're ready to embark on a journey into the world of data visualization, turn the page, and let's explore how to transform data into insights that can change the way you see the world.

Chapter 1

Hierarchical

Hierarchical charts, often referred to as hierarchical diagrams or tree structures, are powerful visual representations that depict relationships and hierarchies among different elements or entities. These charts provide a clear and organized way to showcase the parent-child relationships within a system, organization, process, or any other interconnected set of data points.

Hierarchical charts are widely used in various fields, such as business management, data analysis, organizational structures, genealogy, taxonomy, and project planning, among others. They offer a structured and intuitive means of communicating complex information by breaking it down into manageable levels of detail.

In a hierarchical chart, elements are arranged in a branching structure, resembling a tree with a single root and multiple branches extending outward. Each level of the hierarchy represents a different tier or classification, and the connections between elements illustrate how they are related and dependent on one another. This visual approach aids in understanding the relationships, dependencies, and flows of information, making it easier to make informed decisions, identify patterns, and analyze data.

With the advent of digital tools and software, creating and sharing hierarchical charts has become more accessible than ever before. This allows individuals and teams to collaborate effectively, share insights, and enhance decision-making processes by leveraging the power of visual representation.

In this exploration of hierarchical charts, we will delve deeper into their types, applications, benefits, and how to create and interpret them. Whether you are a business professional, researcher, educator, or simply someone looking to organize and present information more effectively, understanding hierarchical charts can provide you with a valuable tool for visually conveying intricate relationships and structures.

1.1 Cluster dendograms

A cluster dendrogram is a type of hierarchical data visualization that represents the relationships and similarities between data points in a hierarchical manner. It is commonly used in the field of data analysis and clustering.

The dendrogram consists of a tree-like structure, where each data point is represented by a leaf or a branch on the tree. The height or vertical position of each leaf or branch indicates the similarity or dissimilarity between the data points it represents.

At the beginning, each data point is represented as an individual leaf at the bottom of the dendrogram. As the dendrogram builds upwards, similar data points are grouped together into clusters. The height of the branches or merging points in the dendrogram indicates the level of similarity at which the data points are combined.

The arrangement and clustering of the data points in the dendrogram can be determined using different methods, such as hierarchical clustering algorithms like agglomerative clustering or divisive clustering.

Cluster dendrograms provide a visual representation of the relationships and structures within a dataset. They are useful for identifying clusters, subclusters, and outliers within the data. Dendrograms can also assist in determining the optimal number of clusters to use in subsequent analyses or clustering tasks.

Overall, cluster dendrograms serve as a powerful tool for understanding the hierarchical organization and similarities between data points in a dataset.

```python
import numpy as np
import matplotlib.pyplot as plt
from scipy.cluster import hierarchy

# Generate some sample data
np.random.seed(0)
X = np.random.randn(10, 4)

# Calculate the distance matrix using Euclidean distance
dist_matrix = hierarchy.distance.pdist(X, metric='euclidean')

# Perform hierarchical clustering
linkage_matrix = hierarchy.linkage(dist_matrix, method='average')

# Plot the dendrogram
plt.figure(figsize=(8, 6))
dendrogram = hierarchy.dendrogram(linkage_matrix)
plt.title('Cluster Dendrogram')
plt.xlabel('Data Points')
plt.ylabel('Distance')
plt.show()
```

Results:

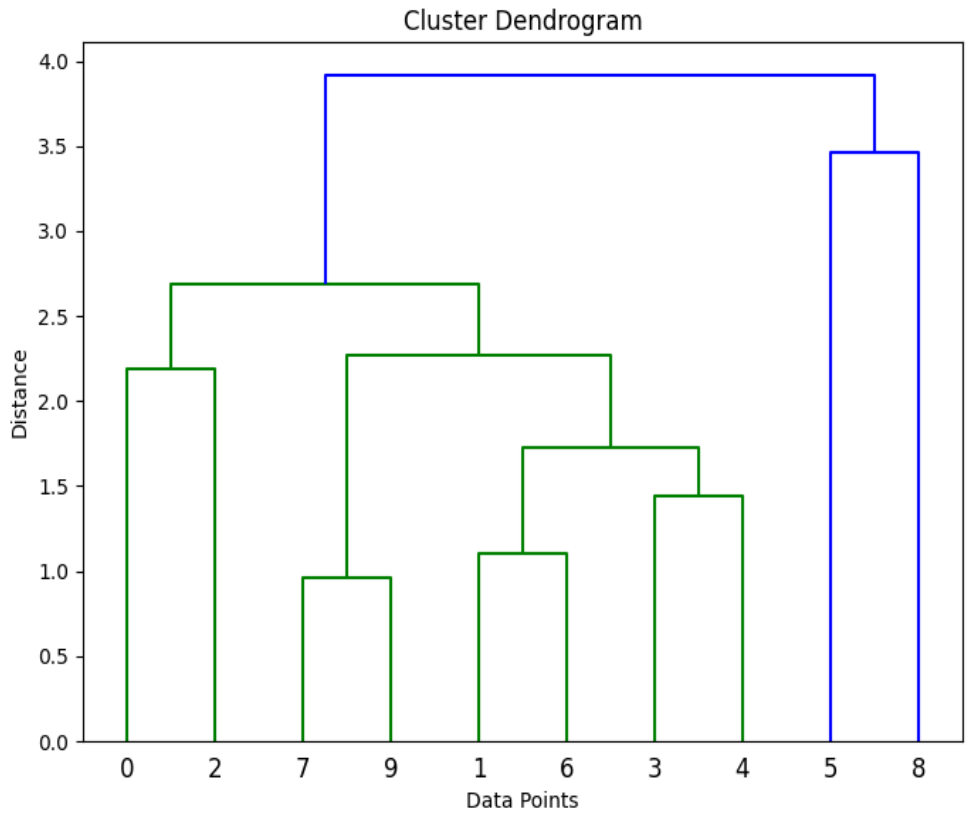

In this example, we first generate a sample dataset X with 10 data points and 4 features. Then, we calculate the distance matrix using the Euclidean distance metric.

Next, we perform hierarchical clustering on the distance matrix using the linkage function from scipy.cluster.hierarchy. We specify the method parameter as 'average', but you can choose other linkage methods based on your specific needs.

Finally, we plot the dendrogram using matplotlib.pyplot and the dendrogram function from scipy.cluster.hierarchy. We set the title, labels for the x-axis and y-axis, and display the dendrogram using plt.show().

Running this code will generate a plot showing the cluster dendrogram, where the vertical height represents the similarity or distance between data points. The branches and merging points in the dendrogram indicate the clusters formed during the hierarchical clustering process.

1.2 Organizational charts

Organizational charts, also known as org charts or hierarchy charts, are graphical representations of the structure and relationships within an organization. They visually depict the positions, roles, and reporting relationships of individuals or departments within a company or any other type of institution.

Organizational charts typically use a hierarchical structure, where the highest level represents the top management or leadership positions, and the lower levels represent various departments, teams, or individuals within the organization. Each level is usually represented by boxes or shapes, with lines or arrows indicating the reporting or communication paths.

The main purpose of an organizational chart is to provide a clear visual representation of the formal structure of an organization, including the chain of command, decision-making lines, and how different parts of the organization are interconnected. It helps employees understand their roles and responsibilities, shows who they report to, and allows them to see how their work fits into the larger organizational structure.

Organizational charts can be simple or complex, depending on the size and complexity of the organization. They are commonly used in businesses, government agencies, non-profit organizations, and other institutions to enhance communication, streamline workflows, and facilitate understanding of the organizational hierarchy.

```python
import matplotlib.pyplot as plt

# Define the positions and relationships
positions = {
    'CEO': ['CFO', 'CTO', 'CIO'],
    'CFO': ['Accounting', 'Finance'],
    'CTO': ['Engineering', 'IT'],
    'CIO': ['Data', 'Systems'],
}

# Create the organizational chart figure and axes
fig, ax = plt.subplots()

# Set the position and size of the chart
chart_pos = [0.1, 0.1, 0.8, 0.8]  # [left, bottom, width, height]
ax.set_position(chart_pos)

# Define the box styles for different positions
box_style = {
    'facecolor': 'lightblue',
    'edgecolor': 'black',
    'boxstyle': 'round,pad=0.3',
}

# Recursive function to draw the chart
def draw_chart(position, level, x, y):
    ax.text(x, y, position, ha='center', va='center', bbox=box_
    style)
    if position in positions:
        children = positions[position]
```

```
        width = 1 / (len(children) + 1)
        for i, child in enumerate(children):
            child_x = x + (i + 1) * width
            child_y = y - level
            ax.plot([x, child_x], [y, child_y], 'k-')
            draw_chart(child, level + 1, child_x, child_y)

# Start drawing the chart from the CEO position
draw_chart('CEO', 1, 0.5, 1)

# Hide the axis ticks and labels
ax.set_xticks([])
ax.set_yticks([])
ax.axis('off')

# Set the title
ax.set_title('Organizational Chart')

# Show the chart
plt.show()
```

Results:

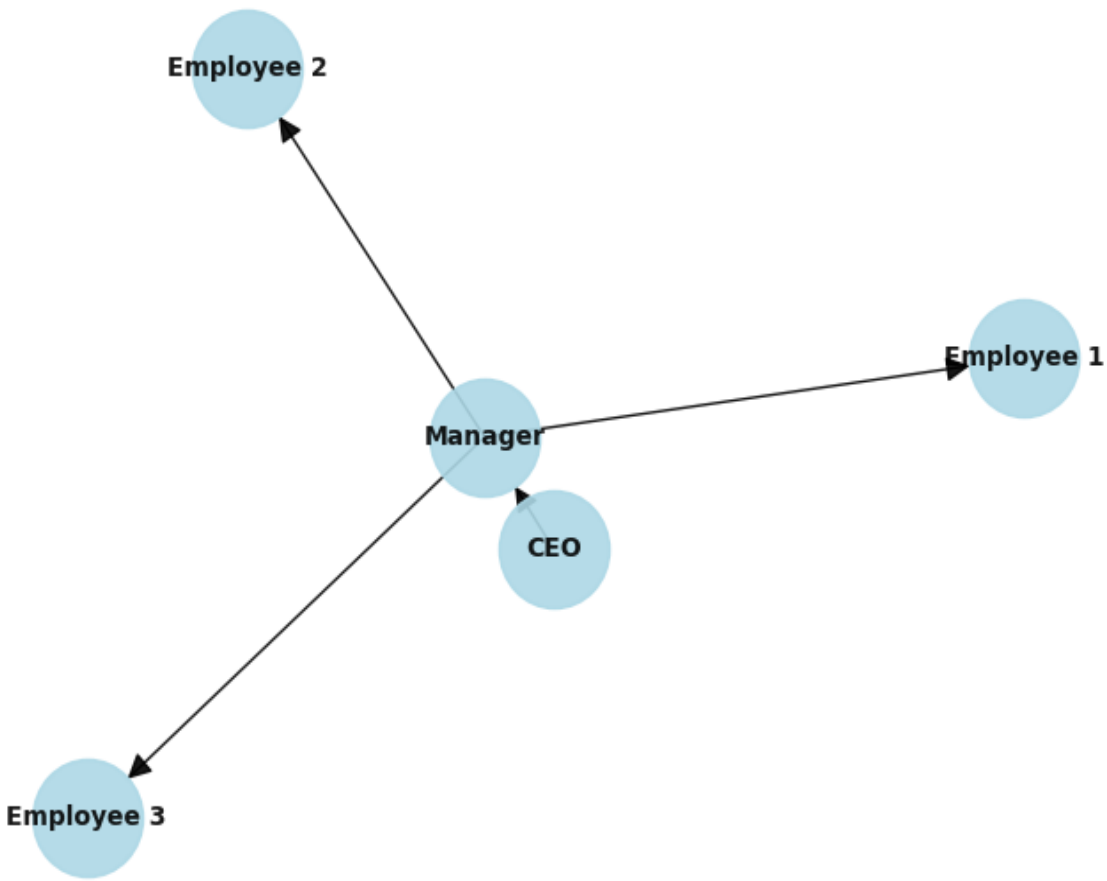

This code will create a simple organizational chart with boxes representing different positions and lines indicating the reporting relationships between them. You can modify the positions dictionary to define your own organizational structure.

1.3 Sunburst chart

A Sunburst chart is a type of hierarchical visualization that represents data in a circular, multilevel format. It is named "sunburst" because its appearance resembles the rays of the sun.

The chart starts with a central circle, which represents the root or the top-level category of the data. From the central circle, "branches" radiate outward, dividing the circle into sections. These sections are proportional in size to the values or proportions they represent.

Each section can be further divided into smaller sections, creating a hierarchical structure. The subdivisions are displayed as concentric rings, where each ring represents a lower level in the hierarchy. The size of each ring segment corresponds to the value or proportion of the data it represents.

Sunburst charts are particularly useful for displaying hierarchical or nested data with multiple levels. They allow you to visualize the composition and proportions of each level in a visually appealing manner. By leveraging color and size, they can effectively convey information about the relative importance or distribution of data elements.

Sunburst charts are commonly used in various fields, such as data analysis, finance, marketing, and organizational hierarchies, to explore and communicate complex hierarchical structures and relationships.

```python
import matplotlib.pyplot as plt

# Sample data for the Sunburst chart
labels = ['A', 'B', 'C', 'D', 'E']
sizes = [30, 15, 25, 10, 20]
colors = ['#ff9999', '#66b3ff', '#99ff99', '#ffcc99', '#c2c2f0']

# Creating the Sunburst chart
fig, ax = plt.subplots()
ax.pie(sizes, labels=labels, colors=colors, startangle=90,
    counterclock=False, wedgeprops=dict(width=0.3))

# Adding a circle in the center to create the "sunburst" effect
centre_circle = plt.Circle((0, 0), 0.70, fc='white')
fig.gca().add_artist(centre_circle)

# Equal aspect ratio ensures that the chart appears as a circle
ax.axis('equal')

# Displaying the Sunburst chart
plt.title("Sunburst Chart")
plt.show()
```

Results:

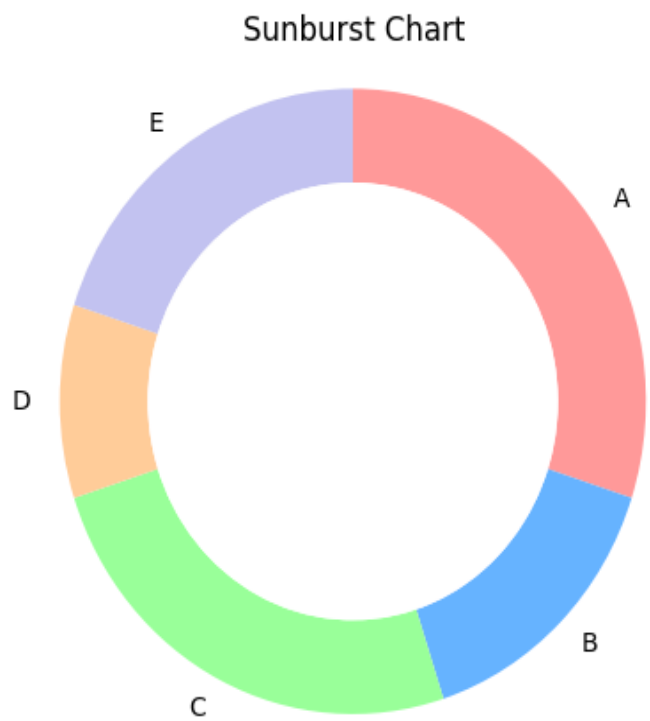

In this example, we define sample data for the chart: labels represent the categories or levels, sizes represent the values or proportions, and colors represent the colors for each category.

Using Matplotlib's pie function, we create a pie chart using the sizes, labels, and colors data. We set the startangle to 90 degrees to make the chart start from the top. The counterclock parameter is set to False to arrange the wedges in a clockwise manner. The wedgeprops parameter is used to specify the width of the wedges to create the desired spacing between them.

To achieve the "sunburst" effect, we add a white circle in the center of the chart using the Circle function from Matplotlib. This circle overlays the center of the chart and gives the appearance of rays radiating outward.

Finally, we set the axis to have an equal aspect ratio to ensure the chart appears as a circle. We add a title to the chart and display it using plt.show().

1.4 Tree diagram

A tree diagram is a type of hierarchical visualization that represents the structure and relationships between different elements or categories of data. It uses a branching structure similar to a tree, where each branch represents a category or subcategory, and the branches further divide into smaller branches or leaf nodes.

In a tree diagram, the main or root node is placed at the top, and it branches out into child nodes. These child nodes can then have additional child nodes, forming a hierarchical structure. The branches or connections between nodes indicate the relationships or dependencies between them.

Tree diagrams are commonly used to represent hierarchical data structures, such as organizational charts, family trees, file directory structures, decision trees, and taxonomies. They provide a visual representation that helps users understand the relationships, dependencies, and levels of a system or data.

The nodes in a tree diagram can be labeled with names, categories, or other relevant information, and they can also be assigned different visual attributes like colors or shapes to convey additional information or distinctions.

Tree diagrams are valuable in organizing and visualizing complex information in a clear and structured manner, making it easier to analyze and comprehend the relationships and hierarchy within a dataset or system.

```
import matplotlib.pyplot as plt

# Define the data for the tree diagram
tree_data = {
    'Root': {
        'Child 1': {},
        'Child 2': {
            'Grandchild 1': {},
            'Grandchild 2': {},
            'Grandchild 3': {},
        },
        'Child 3': {},
    }
}

# Define a recursive function to plot the tree diagram
def plot_tree(ax, data, x, y, dx, dy):
    if not data:
        return

    ax.text(x, y, list(data.keys())[0], ha='center', va='center', bbox=dict(facecolor='white'))
    children = data[list(data.keys())[0]]
    if children:
        dx = dx / len(children)
        x_left = x - dx * len(children) / 2
        for i, child in enumerate(children):
            x_child = x_left + i * dx
            ax.plot([x, x_child], [y, y-dy], '-k')
            plot_tree(ax, {child: children[child]}, x_child, y-dy, dx, dy)
```

```python

# Create the plot
fig, ax = plt.subplots(figsize=(8, 6))
ax.axis('off')

# Call the plot_tree function to create the tree diagram
plot_tree(ax, tree_data, 0.5, 1, 0.8, 0.2)

# Display the tree diagram
plt.show()
```

Results:

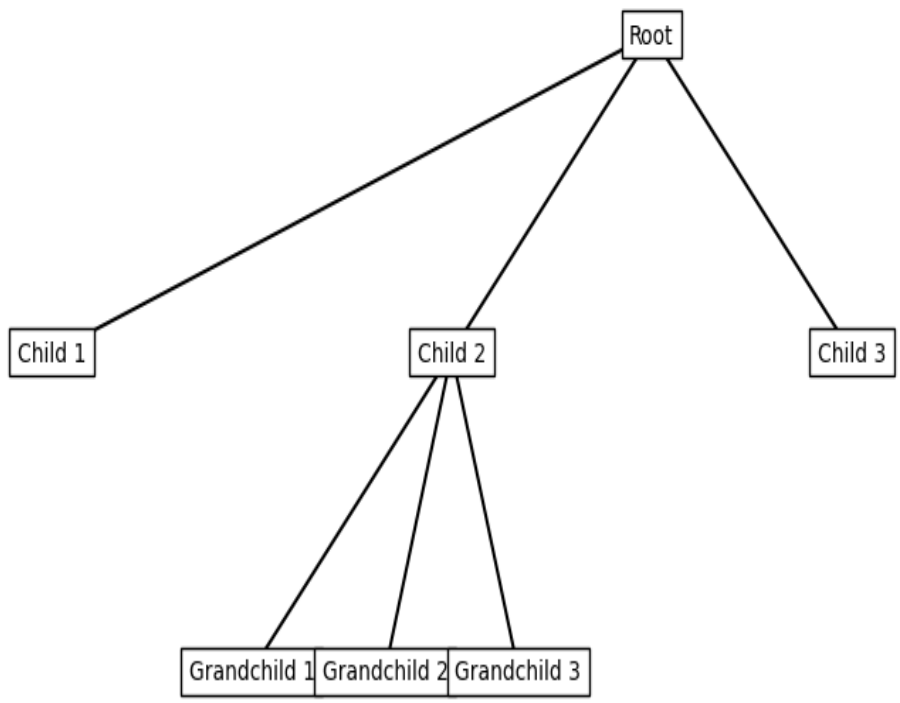

In this example, we define a tree_data dictionary that represents the hierarchical structure of the tree diagram. The keys represent the nodes, and the values are dictionaries representing their children.

The plot_tree function is a recursive function that takes in the ax (axes) object, the data, the position of the current node (x and y), and the spacing (dx and dy). It recursively plots the nodes and their connections using the ax.plot function and calls itself to plot the child nodes.

Finally, we create a plot using matplotlib, set the axes off, and call the

plot_tree function with the provided data and parameters.

When you run this code, it will display a tree diagram with the defined hierarchy. You can modify the tree_data dictionary to represent your own hierarchical structure and visualize it using this code.

1.5 Treemaps

Treemaps are a type of hierarchical data visualization that uses nested rectangles to represent hierarchical structures and display relative proportions of different data elements. They provide a compact and efficient way to visualize large amounts of hierarchical data.

In a treemap, the overall rectangular area represents the entire dataset, and each nested rectangle within it represents a specific category or subcategory. The size of each rectangle is proportional to a specific attribute or value associated with that category.

Typically, treemaps use color coding or shading to encode additional information, such as differentiating between categories or indicating the magnitude of a particular variable. This allows for quick visual identification of patterns, hierarchies, and relative proportions within the data.

Treemaps are particularly useful when visualizing hierarchical data with multiple levels or when comparing the relative sizes of different categories. They are commonly used in various domains, including finance, market analysis, file systems, and organizational structures, among others.

The arrangement of rectangles in a treemap can be done using different algorithms, such as the squarified, slice-and-dice, or ordered layouts, depending on the specific implementation and desired aesthetic.

```python
import matplotlib.pyplot as plt
import squarify

# Example data
categories = ['Category A', 'Category B', 'Category C', 'Category D']
values = [40, 30, 20, 10]

# Compute treemap coordinates
# The 'values' parameter specifies the sizes of the rectangles
# The 'label' parameter assigns labels to the rectangles
# The 'alpha' parameter controls the transparency of the rectangles
# The 'color' parameter assigns colors to the rectangles
squarify.plot(sizes=values, label=categories, alpha=0.7, color=['red', 'green', 'blue', 'yellow'])

# Set plot title and axis labels
plt.title('Treemap Example')
plt.axis('off')

# Display the treemap
plt.show()
```

Results:

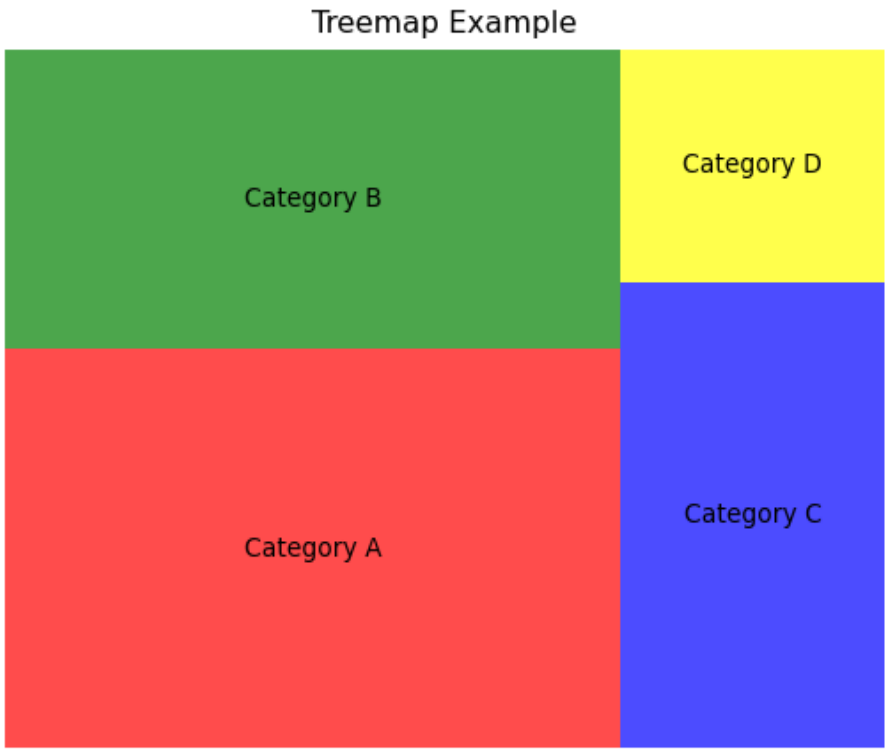

In this example, we import the necessary libraries (matplotlib.pyplot and squarify). We define the categories and their corresponding values. Then, we use the squarify.plot() function to generate the treemap visualization. We specify the sizes of the rectangles with the sizes parameter, assign labels to the rectangles with the label parameter, set the transparency with alpha, and assign colors to the rectangles using the color parameter. Finally, we add a title to the plot and turn off the axis labels. The resulting treemap is displayed using plt.show().

1.6 Comparison

1. Sunburst Charts:
   Pros:

   - Intuitive and visually appealing representation of hierarchical data.
   - Easily show the relationship between the whole and its parts.
   - Suitable for displaying proportions and percentages in nested data.
   - Can be interactive, allowing users to explore the data at different levels of granularity.

   Cons:

   - May not be suitable for displaying large datasets or deep hierarchies, as it can become cluttered and hard to read.
   - Labels for small segments may be difficult to read, especially if they overlap.
   - Limited space for showing detailed information at lower levels of the hierarchy.

   2. Treemaps:
   Pros:

   - Efficiently display hierarchical data and allow comparison of proportions within and between levels.
   - Good for visualizing large datasets and deep hierarchies.
   - Rectangular layout optimizes space utilization.
   - Easily highlight large and small values based on area size.

   Cons:

   - Treemaps can become visually cluttered and challenging to interpret if there are many small segments or nested levels.
   - Comparing areas may not always be as intuitive as comparing lengths or angles in other chart types.
   - Labeling can be an issue when dealing with small rectangles, especially when the text needs to fit within them.

   3. Tree Diagrams:
   Pros:

   - Clear representation of hierarchical relationships in a tree-like structure.

- Easily show parent-child relationships and the flow of information.
- Ideal for visualizing decision trees, organizational structures, or family trees.

Cons:

- Limited space for displaying detailed information, especially if the tree has many levels.
- Can become complex and hard to follow when dealing with a large number of nodes or branches.
- Tree diagrams may not be well-suited for representing quantitative data, as they focus on relationships rather than proportions.

4. Organizational Charts:
Pros:

- Provide a clear and hierarchical representation of an organization's structure, roles, and reporting lines.
- Help in understanding the chain of command and departmental relationships.
- Useful for depicting job roles, responsibilities, and communication paths in a company.

Cons:

- Organizational charts can quickly become outdated, especially in large organizations with frequent changes.
- May not capture informal or dynamic relationships that exist within an organization.
- Limited in displaying additional information about employees or specific departments.

5. Cluster Dendrograms:
Pros:

- Show hierarchical relationships in a tree-like structure, often used in clustering and data analysis.
- Useful for understanding the similarity or dissimilarity between groups or data points.
- Dendrograms can help in decision-making and pattern recognition.

Cons:

- Interpreting complex dendrograms can be challenging, especially for non-experts.
- Dendrograms can become unwieldy when dealing with a large number of data points or clusters.
- Difficult to quantify the distance between clusters or data points accurately.

The suitability of each visualization type depends on the specific data and the insights you want to convey. It's essential to choose the right chart based on your audience's understanding and the complexity of the data being presented. In some cases, combining different chart types or using interactive features may help overcome certain limitations.

Chapter 2

Temporal

Time series data is a fundamental aspect of various fields, including finance, economics, science, and engineering, where the progression of data points is tracked over a continuous sequence of time intervals. Analyzing and understanding time series data is essential for making informed decisions, identifying patterns, and predicting future trends. Visualizing such data is a crucial step in uncovering insights and conveying complex information effectively to both technical and non-technical audiences.

Charts and graphs are powerful tools that enable us to visually represent the temporal patterns, trends, and fluctuations present in time series data. These visualizations transform raw numbers into meaningful insights, allowing us to grasp the underlying dynamics and relationships within the data. By providing a clear and intuitive representation of data points over time, charts play a pivotal role in aiding decision-making, identifying anomalies, and communicating findings.

In this exploration of charts for time series data, we will delve into various types of visualizations that are commonly employed to analyze and interpret temporal patterns. From simple line charts that depict the trajectory of a single variable over time, to more advanced techniques like candlestick charts and heatmaps, each visualization method offers unique advantages in revealing specific aspects of time-dependent data. Additionally, we will discuss the considerations and best practices for selecting the appropriate chart type based on the characteristics of the data and the analytical objectives.

2.1 line chart

Line graphs, also known as line charts, are a type of graph that displays data points connected by straight lines. They are commonly used to represent and visualize the relationship between two continuous variables over a specific period or range.

Line graphs typically have two axes: a horizontal x-axis that represents the independent variable (such as time, distance, or categories), and a vertical y-axis that represents the dependent variable (such as temperature, sales, or quantity).

To create a line graph, data points are plotted on the graph at their respective x and y coordinates. The points are then connected by lines, forming a continuous line that represents the trend or pattern in the data. The resulting graph provides a visual representation of how the dependent variable changes in relation to the independent variable.

Line graphs are particularly useful for displaying trends, patterns, and fluctuations over time. They allow us to easily identify the overall direction of the data (increasing, decreasing, or staying relatively constant) and any notable variations or changes in the data series. Line graphs can also be used to compare multiple data series by plotting multiple lines on the same graph, each representing a different variable.

Line graphs are widely used in various fields, including finance, economics, science, and social sciences, to analyze and communicate data trends effectively.

```python
import matplotlib.pyplot as plt

# Sample data
x = [1, 2, 3, 4, 5]  # x-axis values
y = [2, 4, 6, 8, 10]  # y-axis values

# Plotting the line graph
plt.plot(x, y, marker='o', linestyle='-')

# Adding labels and title
plt.xlabel('X-axis')
plt.ylabel('Y-axis')
plt.title('Line Graph Example')

# Displaying the graph
plt.show()
```

Results:

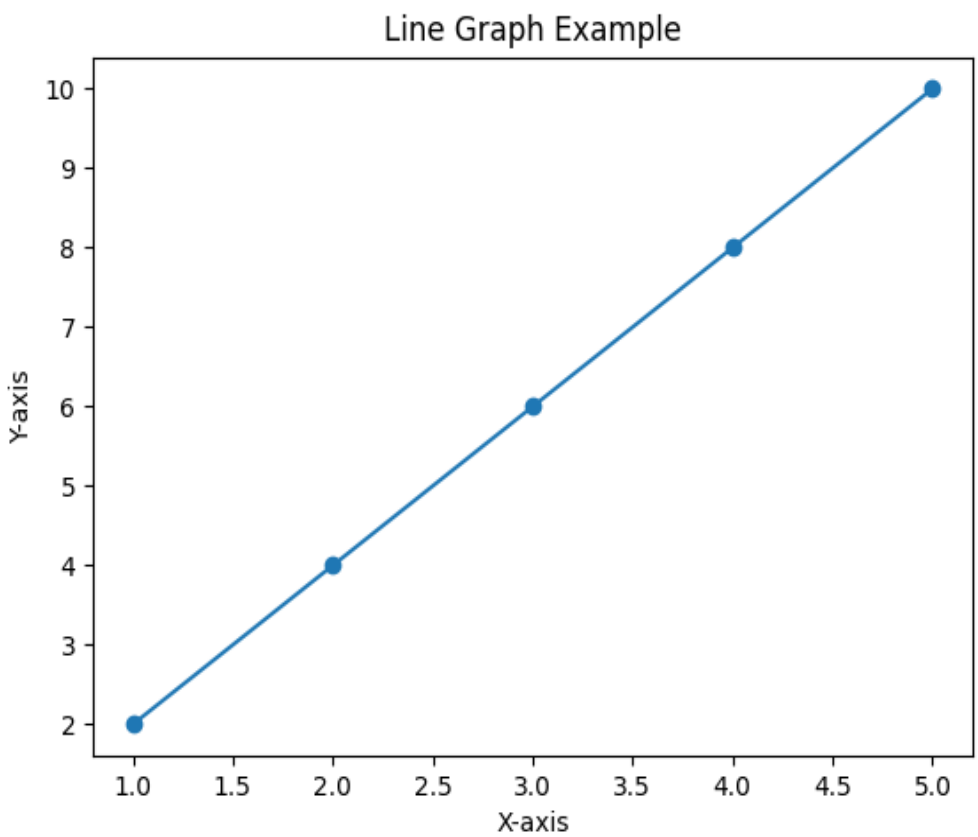

In this example, we first import the matplotlib.pyplot module, which provides a collection of functions to create visualizations. We then define the x-axis values (x) and y-axis values (y) as simple lists.

Next, we use the plt.plot() function to plot the line graph. We pass the x-axis values and y-axis values as arguments, and specify the marker style (here, 'o' for circles) and the line style (here, '-' for a solid line).

After that, we add labels to the x-axis and y-axis using plt.xlabel() and plt.ylabel() respectively. We also set the title of the graph using plt.title().

Finally, we display the graph using plt.show(), which will open a window showing the line graph with the provided data.

You can modify the values in the x and y lists to represent your own data and customize the graph further based on your requirements.

2.2 area chart

Area charts are a type of graph that visually represents quantitative data over a continuous interval or time period. They are similar to line graphs but have the area beneath the line filled with color or shading. The resulting shape formed by the line and the filled area creates a visual depiction of the cumulative values or proportions of the data.

In an area chart, the horizontal axis represents the independent variable, such as time, while the vertical axis represents the dependent variable, typically a numeric value. The data points are plotted on the graph, and the area between the line connecting these points and the horizontal axis is filled.

Area charts are useful for showing the overall trend and the magnitude of a dataset over time or a continuous scale. They are particularly effective for displaying cumulative data, such as tracking the total sales of a product over a period, as the filled area emphasizes the accumulation of values.

By comparing the areas between different lines or multiple data series on the same chart, you can observe the relative proportions and trends between different categories or variables. Area charts are especially helpful for identifying patterns, fluctuations, and changes in data over time.

It's worth noting that while area charts are excellent for displaying cumulative or aggregated data, they may not be suitable for precise comparisons between individual data points or for displaying individual data values. In such cases, other chart types like line graphs or bar charts may be more appropriate.

```python
import matplotlib.pyplot as plt

# Sample data
years = [2010, 2011, 2012, 2013, 2014, 2015]
data_series1 = [4, 6, 8, 5, 7, 9]
data_series2 = [2, 5, 3, 6, 4, 7]

# Plotting the area chart
plt.figure(figsize=(8, 6))  # Adjust the figure size as needed
plt.stackplot(years, data_series1, data_series2, labels=['Series 1'
    , 'Series 2'], alpha=0.5)
plt.xlabel('Year')
plt.ylabel('Data Value')
plt.title('Example Area Chart')
plt.legend(loc='upper left')

# Display the chart
plt.show()
```

Results:

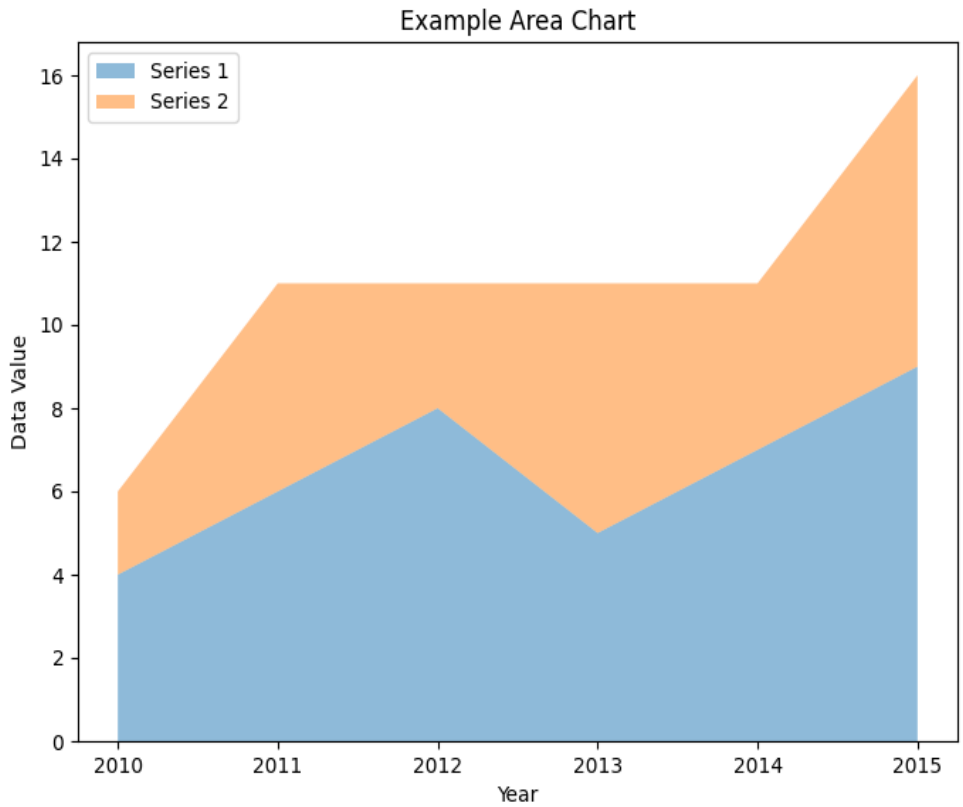

In this example, we have two data series represented by data_series1 and data_series2 corresponding to the years [2010, 2011, 2012, 2013, 2014, 2015]. The stackplot() function from Matplotlib is used to create the area chart, where the years array is used for the x-axis and the data series arrays are used for the y-axis.

The stackplot() function stacks the areas for each data series on top of each other, creating the filled areas. The labels parameter is used to provide labels for each data series, and alpha determines the transparency of the areas.

Additional functions like xlabel(), ylabel(), and title() are used to set the labels and title for the chart. Finally, legend() is used to display a legend indicating the labels for each data series.

Running this code will generate an area chart displaying the two data series over time, with the filled areas representing the cumulative values of the data.

In this example, we first import the matplotlib.pyplot module, which provides a collection of functions to create visualizations. We then define the x-axis values (x) and y-axis values (y) as simple lists.

Next, we use the plt.plot() function to plot the line graph. We pass the x-

axis values and y-axis values as arguments, and specify the marker style (here, 'o' for circles) and the line style (here, '-' for a solid line).

After that, we add labels to the x-axis and y-axis using plt.xlabel() and plt.ylabel() respectively. We also set the title of the graph using plt.title().

Finally, we display the graph using plt.show(), which will open a window showing the line graph with the provided data.

You can modify the values in the x and y lists to represent your own data and customize the graph further based on your requirements.

2.3 Candlestick chart

Candlestick charts are a type of financial chart used to represent the price movement of an asset, typically stocks, over a specific time period. They provide a visual depiction of price fluctuations and are widely used in technical analysis to analyze market trends and make informed trading decisions.

A candlestick consists of four main components: the open, high, low, and close prices for a given time interval, such as a day or an hour. Each candlestick on the chart represents this price data for that specific interval.

The body of the candlestick is a rectangular shape that represents the price range between the open and close prices. If the closing price is higher than the opening price, the body is usually filled or colored, often green or white. This indicates a bullish (positive) sentiment and suggests that the price increased during that time interval. Conversely, if the closing price is lower than the opening price, the body is usually unfilled or colored, often red or black, indicating a bearish (negative) sentiment and a price decrease.

The upper and lower lines, known as "wicks" or "shadows," extend vertically from the top and bottom of the body, representing the high and low prices reached during the time interval. They provide additional information about the price range and volatility.

By examining the patterns and formations of candlesticks over multiple time periods, traders can identify trends, reversals, and potential price patterns. This analysis helps them make predictions about future price movements and inform their trading strategies.

Candlestick charts provide a comprehensive visual representation of price data, making it easier to interpret and analyze market dynamics compared to other types of charts.

```python
import matplotlib.pyplot as plt
from mplfinance import candlestick_ohlc
import pandas as pd
import matplotlib.dates as mdates

# Sample data
data = [
    ['2023-06-18', 145.5, 148.2, 142.6, 146.8],
    ['2023-06-19', 146.9, 150.3, 144.2, 148.7],
    ['2023-06-20', 149.0, 152.8, 148.2, 151.4],
    ['2023-06-21', 152.0, 154.7, 150.3, 153.2],
    ['2023-06-22', 153.8, 155.5, 151.9, 154.2]
]

# Convert data to a DataFrame
df = pd.DataFrame(data, columns=['Date', 'Open', 'High', 'Low', 'Close'])

# Convert 'Date' column to datetime
df['Date'] = pd.to_datetime(df['Date'])

# Set the 'Date' column as the index
df.set_index('Date', inplace=True)
```

```python

# Create a new column with numerical index for plotting
df['Index'] = range(len(df))

# Convert the DataFrame to the required format for candlestick_ohlc
ohlc_data = df[['Index', 'Open', 'High', 'Low', 'Close']].values

# Create the figure and axis objects
fig, ax = plt.subplots()

# Plot the candlestick chart
candlestick_ohlc(ax, ohlc_data, width=0.5, colorup='g', colordown='r')

# Format the x-axis to display dates
ax.xaxis.set_major_formatter(mdates.DateFormatter('%Y-%m-%d'))
ax.xaxis.set_major_locator(mdates.DayLocator())

# Rotate x-axis labels for better readability
plt.xticks(rotation=45)

# Set axis labels and title
plt.xlabel('Date')
plt.ylabel('Price')
plt.title('Candlestick Chart')

# Display the chart
plt.show()
```

Results:

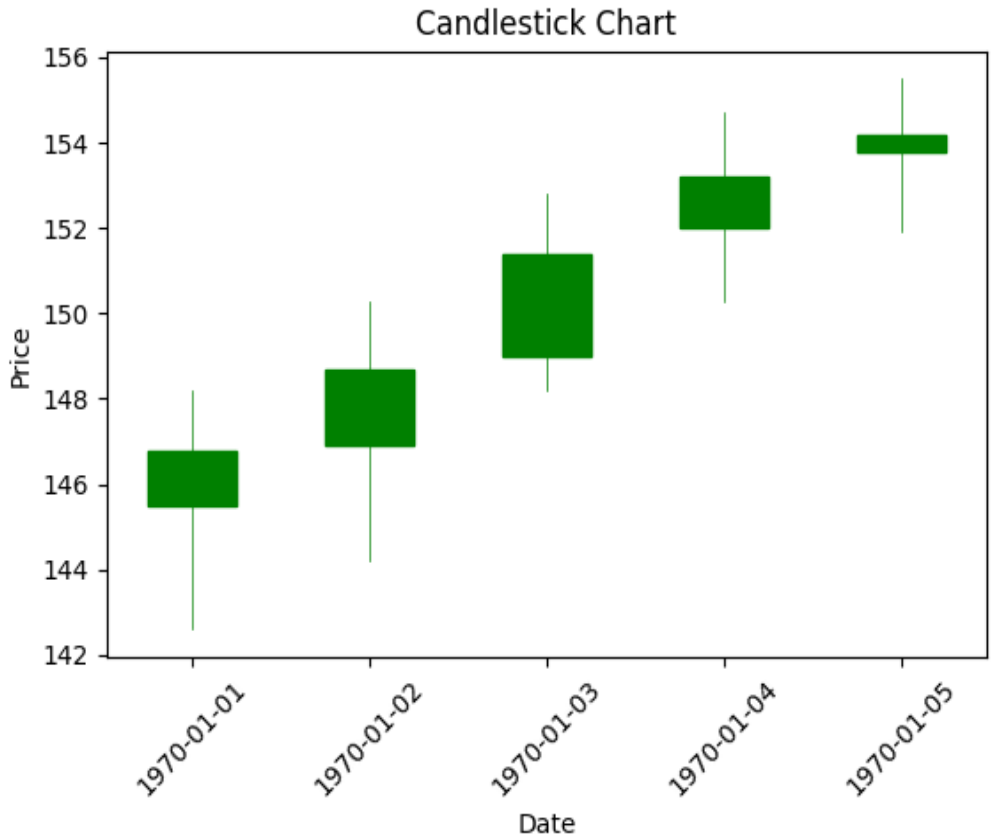

In this example, we create a DataFrame with sample data representing the open, high, low, and close prices for a few days. We convert the 'Date' column to a datetime type and set it as the index. Then, we convert the DataFrame to the required format for the candlestick_ohlc function from the mplfinance library. Finally, we plot the candlestick chart using candlestick_ohlc, format the x-axis to display dates, and add labels and a title to the chart. Running this code will generate a candlestick chart displaying the price movements over the specified time period.

2.4 Gantt chart

A Gantt chart is a type of horizontal bar chart that is commonly used in project management to illustrate the scheduling and progress of tasks over time. It provides a visual representation of a project's timeline, showing the start and end dates of individual tasks, their durations, and how they relate to each other.

Here are the key components and features of a Gantt chart:

1. Task bars: Each task is represented by a horizontal bar on the chart. The length of the bar corresponds to the duration of the task, and its position along the timeline indicates the start and end dates.

2. Timeline: The chart typically has a horizontal timeline that represents the project's duration. It is divided into increments such as days, weeks, or months, depending on the scale of the project.

3. Dependencies: Gantt charts can show dependencies between tasks, indicating which tasks need to be completed before others can start. These dependencies are often shown as arrows connecting the related task bars.

4. Milestones: Milestones represent significant events or achievements within the project. They are usually depicted as vertical markers or special symbols on the chart, indicating important dates or key deliverables.

5. Resource allocation: Some Gantt charts also include information about the resources assigned to each task. This helps project managers visualize the workload and ensure that resources are appropriately allocated.

Gantt charts are particularly useful for planning, tracking, and communicating project schedules. They provide a clear overview of tasks, their durations, and their interdependencies, allowing project teams to identify critical paths, monitor progress, and make adjustments as needed. With the visual nature of Gantt charts, stakeholders can easily understand project timelines and the sequence of activities involved.

```python
import matplotlib.pyplot as plt
import pandas as pd

# Create a sample dataset
data = {
    'Task': ['Task 1', 'Task 2', 'Task 3', 'Task 4'],
    'Start Date': ['2023-06-01', '2023-06-05', '2023-06-08', '2023-06-12'],
    'End Date': ['2023-06-10', '2023-06-15', '2023-06-13', '2023-06-20']
}

df = pd.DataFrame(data)

# Convert date columns to datetime format
df['Start Date'] = pd.to_datetime(df['Start Date'])
df['End Date'] = pd.to_datetime(df['End Date'])

# Sort the dataframe by Start Date
df = df.sort_values('Start Date')

# Set up the plot
```

```
fig, ax = plt.subplots(figsize=(10, 5))

# Plot the horizontal bars
ax.barh(df['Task'], df['End Date'] - df['Start Date'], left=df['
    Start Date'])

# Customize the appearance
ax.set_xlabel('Date')
ax.set_ylabel('Task')
ax.set_title('Gantt Chart')
ax.xaxis_date()  # Display dates on the x-axis

# Adjust the date format on the x-axis
date_format = '%Y-%m-%d'  # Format: Year-Month-Day
ax.xaxis.set_major_formatter(plt.DateFormatter(date_format))

# Display the chart
plt.tight_layout()
plt.show()
```

Results:

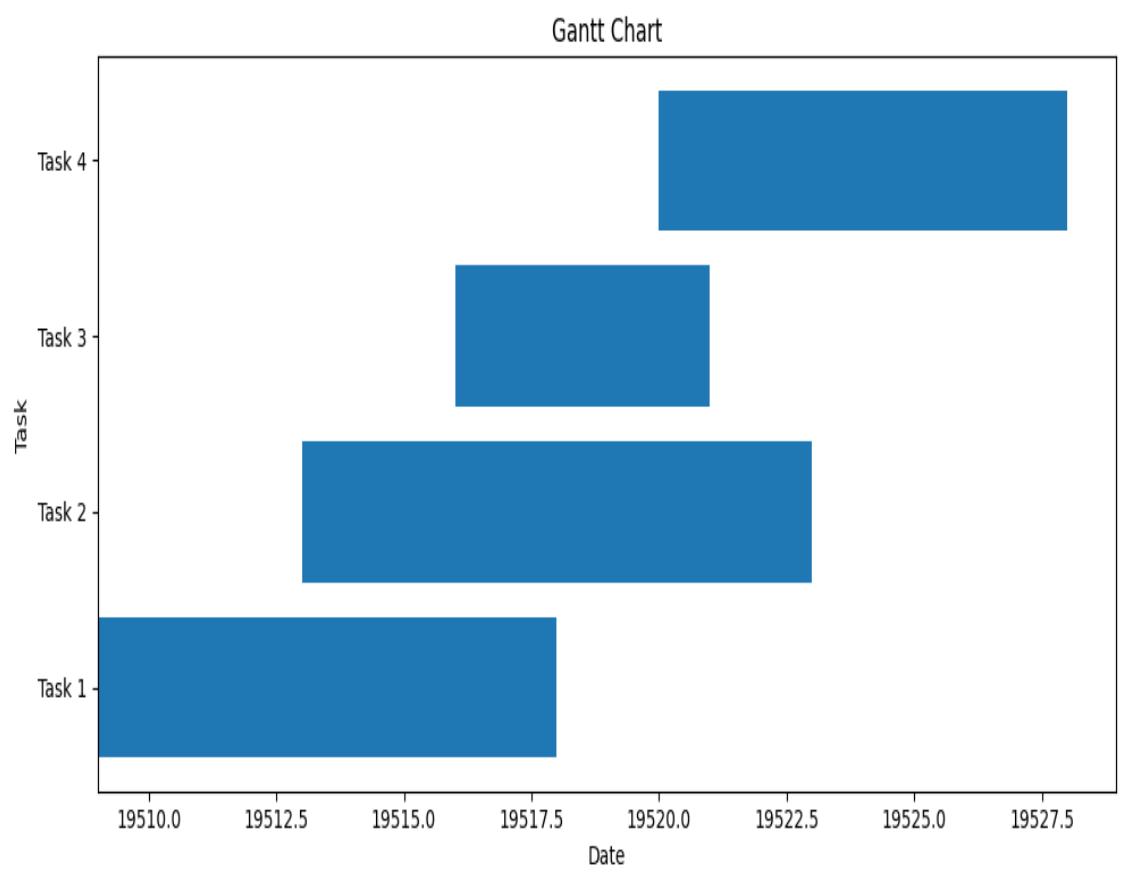

In this example, we first create a sample dataset with task names, start dates, and end dates. We then convert the date columns to the datetime format using pd.to_datetime() from the pandas library.

Next, we sort the dataframe by the start dates to ensure the tasks are plotted in chronological order. We set up the plot using plt.subplots() and create a horizontal bar chart using ax.barh(). The duration of each task is calculated by subtracting the start date from the end date.

We customize the appearance of the chart by setting labels, titles, and formatting the x-axis to display dates using ax.set_xlabel(), ax.set_ylabel(), ax.set_title(), and ax.xaxis.set_major_formatter().

Finally, we display the Gantt chart using plt.tight_layout() to adjust the layout and plt.show() to show the plot.

You can modify the example by using your own dataset or adding additional customizations based on your specific requirements.

2.5 Heatmaps

A heatmap (time series) is a type of data visualization that combines elements of both temporal and spatial representations. It is particularly useful for visualizing patterns and trends in data that vary over time and across different categories or dimensions.

In a heatmap (time series), a rectangular grid is used to represent the data points, where each cell in the grid corresponds to a specific time period and category. The intensity of color or shading within each cell represents the magnitude or value of the data for that particular combination of time and category.

Typically, a color scale is used to map the data values to different colors or shades. For example, warmer colors like red or orange can indicate higher values, while cooler colors like blue or green can represent lower values. The color intensity or saturation provides a visual cue about the strength or magnitude of the data.

By observing the heatmap (time series), patterns and trends can be easily identified. For instance, you may notice darker shades or hotter colors in specific time periods and categories, indicating higher values or frequencies. This helps in spotting patterns, identifying anomalies, and understanding the relationships between variables over time.

Heatmaps (time series) are commonly used in various domains, including finance, climate science, sales analysis, and web analytics. They offer a powerful and intuitive way to explore and analyze complex data sets that involve both temporal and categorical dimensions.

```python
import numpy as np
import pandas as pd
import seaborn as sns
import matplotlib.pyplot as plt

# Create a sample dataset
categories = ['Category 1', 'Category 2', 'Category 3']
time_periods = pd.date_range(start='2023-01-01', end='2023-12-31',
    freq='M')
data = np.random.randint(low=0, high=100, size=(len(time_periods),
    len(categories)))
df = pd.DataFrame(data, index=time_periods, columns=categories)

# Create the heatmap
plt.figure(figsize=(10, 6))
sns.heatmap(df, cmap='YlOrRd', annot=True, fmt='d', cbar=True)
plt.title('Heatmap (Time Series)')
plt.xlabel('Category')
plt.ylabel('Time Period')
plt.xticks(rotation=45)
plt.yticks(rotation=0)
plt.show()
```

Results:

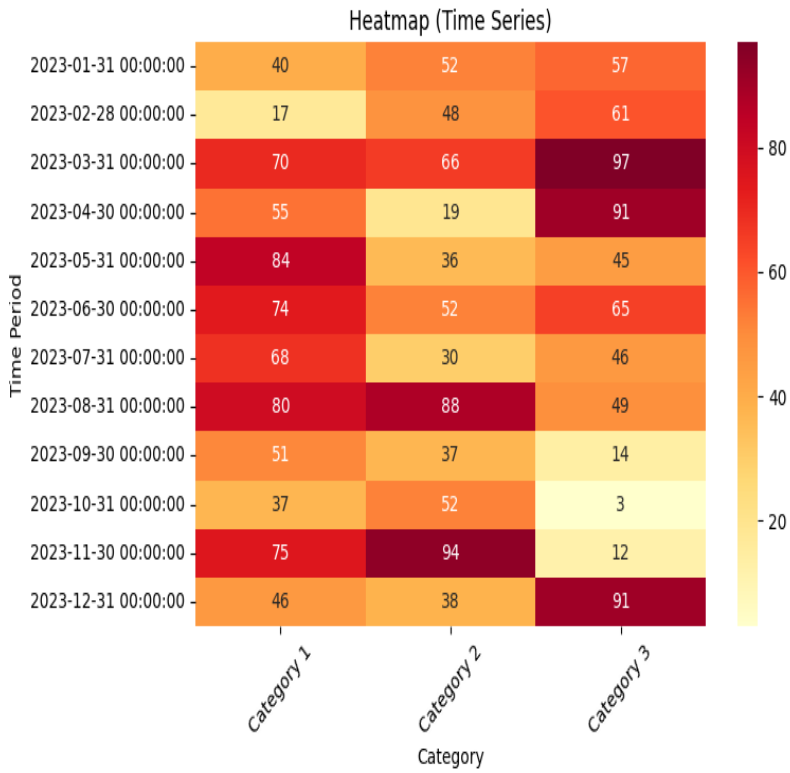

In this example, we first create a sample dataset with three categories (Category 1, Category 2, and Category 3) and a range of time periods spanning from January 2023 to December 2023. The dataset is then represented as a Pandas DataFrame.

Next, we use the seaborn library to create the heatmap using the sns.heatmap() function. We pass the DataFrame df as the data to be visualized. We customize the color map (cmap) to use the 'YlOrRd' color palette, add annotations (annot=True) to display the data values within each cell, and format the annotations as integers (fmt='d'). The color bar (cbar=True) is included to indicate the color scale.

Finally, we add titles, labels, and rotate the x-axis labels for better readability. The resulting heatmap (time series) visualization will be displayed using plt.show().

2.6 Comparison

Let's go through the pros and cons of each type of chart for time series data:

1. Line Graph:

Pros:

- Clear and straightforward representation of trends over time.
- Effective in showing continuous data and identifying patterns and changes.
- Easy to interpret and understand for most audiences.
- Suitable for comparing multiple time series on the same plot.

Cons:

- Lacks the ability to show the distribution of data or variability around the trend.
- Might not be suitable for displaying large amounts of data points.

2. Area Graph:

Pros:

- Similar benefits to line graphs, but with the added advantage of showing the magnitude of the data between the line and the axis, making it useful for visualizing the overall contribution of different series.
- Useful when you want to emphasize cumulative totals or compare the total values of multiple time series.

Cons:

- The area between the lines can make it difficult to compare specific values accurately.
- Not ideal for displaying negative values, as the area below the axis might create confusion.

3. Candlestick Chart:

Pros:

- Widely used in financial and stock market analysis.
- Provides information about the opening, closing, high, and low prices within a specific time period.
- Clearly displays the price volatility and price range.
- Useful for identifying trends and patterns in financial data.

Cons:

- Primarily suited for financial data and might not be as applicable to other time series datasets.
- Can be overwhelming for people unfamiliar with financial charting.

4. Gantt Chart:
Pros:

- Excellent for visualizing project schedules, tasks, and timelines.
- Clearly shows the start and end dates of each task in a project.
- Helps in resource planning and workload distribution.
- Enables easy identification of dependencies and critical paths.

Cons:

- Limited use for displaying continuous data trends or large-scale time series.
- Can become cluttered and challenging to read if there are many tasks or a long timeline.

5. Heatmap (Time Series):
Pros:

- Great for displaying large datasets with multiple variables and time points.
- Easily identifies patterns, correlations, and anomalies.
- Facilitates spotting trends and seasonality in time series data.
- Effective for visualizing how variables change over time.

Cons:

- Might be overwhelming when dealing with too many variables or time points.
- Less intuitive for presenting detailed information about specific data points.

In conclusion, the choice of the best chart depends on the specific data and the insights you want to communicate. Line graphs and area graphs are good for simple trends, while candlestick charts are more suitable for financial data. Gantt charts work well for project timelines, and heatmaps are excellent for identifying patterns and correlations in large time series datasets. Consider the context and the audience when selecting the most appropriate chart type for your data visualization.

Chapter 3

Distribution

Distribution charts are powerful visual tools used in statistics and data analysis to represent the spread and frequency of data values within a dataset. Also known as frequency distribution charts or histograms, these graphical representations provide valuable insights into the underlying patterns, tendencies, and characteristics of a dataset. By displaying the distribution of data points along a continuous or discrete range, distribution charts allow analysts, researchers, and decision-makers to easily identify central tendencies, variations, outliers, and potential trends within the data.

Distribution charts come in various forms, each catering to specific types of data and analysis goals. From simple bar charts and histograms to more advanced density plots and box plots, these visualizations facilitate the exploration and comprehension of complex datasets. Whether you're examining the age distribution of a population, the frequency of product sales, or the scores of a test, distribution charts offer an intuitive way to grasp the distributional properties and make informed decisions based on data-driven insights.

In this exploration of distribution charts, we will delve into the different types of distribution charts, their components, interpretation, and practical applications in various fields. By mastering the art of reading and creating distribution charts, you'll unlock the ability to unlock hidden insights and make well-informed conclusions from your data.

3.1 Violin

A violin chart, also known as a violin plot, is a type of data visualization that combines aspects of a box plot with a kernel density plot. It is used to display the distribution of a numeric variable or multiple variables across different categories or groups.

A violin chart typically consists of one or more "violins," which are mirrored, symmetrical shapes resembling violins or viola. Each violin represents a category or group, and its width corresponds to the frequency or density of data points at different values along the y-axis.

The key components of a violin chart are:

1. Violin Body: The central part of the chart represents the distribution of the data. It typically displays a kernel density plot, which shows the probability density of the data at various values. The width of the violin at a given point indicates the density of data points at that value.

2. Interquartile Range (IQR): Inside the violin body, a box plot-like representation is often included to show the quartiles (25th, 50th, and 75th percentiles) of the data. This provides information about the spread and central tendency of the distribution.

3. Whiskers: Instead of traditional whiskers, violin charts often use lines that extend from the edges of the violin body to represent the minimum and maximum values of the data.

Violin charts are particularly useful when you want to compare the distribution of a variable across different categories or groups. They provide insights into the shape of the distribution, such as the presence of multiple modes, skewness, or symmetry. They can also reveal differences in spread and central tendency between categories. Violin charts are commonly used in statistical analysis, data exploration, and data-driven storytelling.

```
import matplotlib.pyplot as plt
import numpy as np

# Generate random data for three categories
np.random.seed(0)
data1 = np.random.normal(0, 1, 100)
data2 = np.random.normal(2, 1, 100)
data3 = np.random.normal(-2, 0.5, 100)

# Create a list of data for each category
data = [data1, data2, data3]

# Create the violin chart
fig, ax = plt.subplots()
ax.violinplot(data)

# Customize the chart
ax.set_xlabel('Categories')
ax.set_ylabel('Values')
ax.set_title('Violin Chart Example')

# Add x-axis tick labels
```

```
ax.set_xticks([1, 2, 3])
ax.set_xticklabels(['Category 1', 'Category 2', 'Category 3'])

# Show the chart
plt.show()
```

Results:

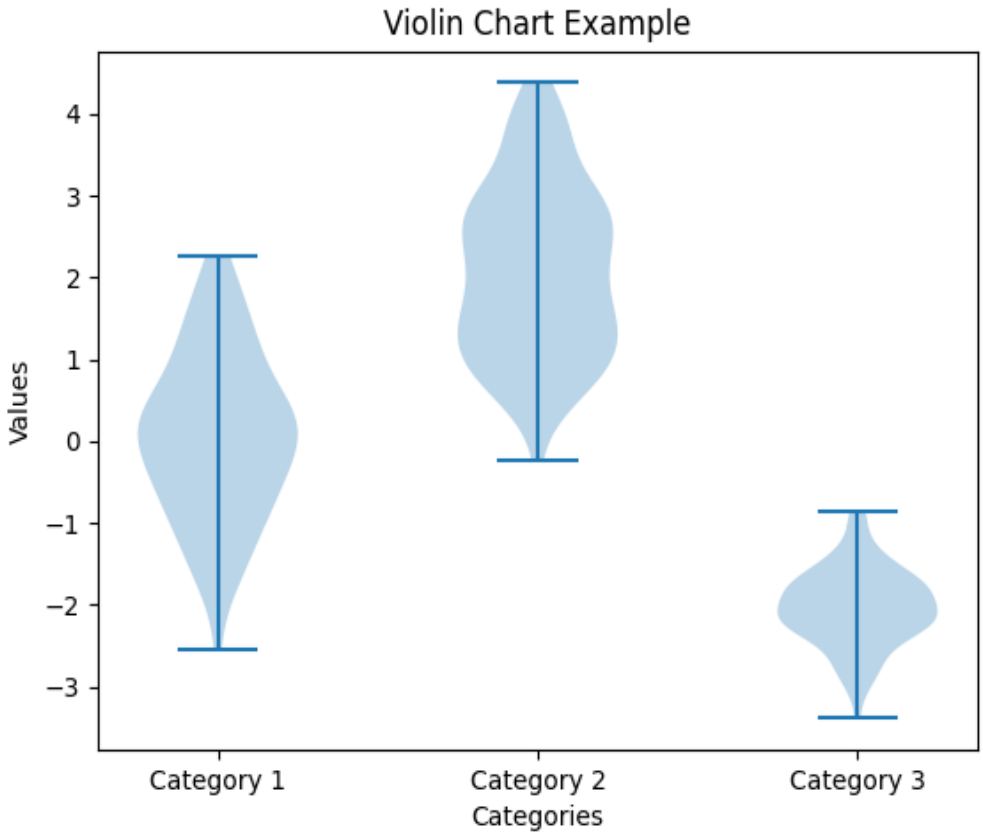

In this example, we first import the necessary libraries. We then generate random data for three categories using numpy.random.normal(). Next, we create a list (data) that contains the data for each category.

We create a figure and axis object using plt.subplots(). Then, we plot the violin chart using ax.violinplot(data).

To customize the chart, we set the x-label, y-label, and title using ax.set_xlabel(), ax.set_ylabel(), and ax.set_title(), respectively. We also add x-axis tick labels using ax.set_xticks() and ax.set_xticklabels().

Finally, we display the chart using plt.show(). Running this code will generate a violin chart with three violins representing the distributions of the data for each category.

3.2 Density

Density charts, also known as density plots or kernel density plots, are a type of data visualization that represents the distribution of a continuous variable. They provide insights into the shape and concentration of data points along the range of values.

Instead of showing individual data points like in a scatter plot, density charts estimate and display the probability density function (PDF) of the data. The PDF represents the likelihood of a given value occurring within the dataset.

Density charts use a smooth curve to represent the distribution, which is derived from a mathematical function called a kernel. The kernel represents a smooth, symmetric, and bell-shaped curve centered on each data point. By summing up these individual kernels, a smooth density curve is created.

The density curve typically has the y-axis representing the density or probability density, while the x-axis represents the range of values for the variable being analyzed. The height of the curve at a particular point indicates the relative concentration of data points around that value. Areas under the curve represent the probability of observing data within specific ranges.

Density charts are particularly useful for visualizing continuous variables with large datasets or when comparing multiple distributions. They can reveal information about the shape of the data, such as whether it is symmetric, skewed, or multimodal. They also enable the identification of peaks, valleys, and areas of high or low density within the data distribution.

Common variations of density charts include the kernel density estimate (KDE), which is a non-parametric approach, and the smoothed histogram, which approximates the density using bins. These variations provide flexibility in visualizing different types of data and offer different levels of detail and smoothness.

```python
import numpy as np
import matplotlib.pyplot as plt

# Generating random data (normal distribution)
np.random.seed(42)
data = np.random.normal(loc=0, scale=1, size=1000)

# Create a density plot using KDE
plt.figure(figsize=(8, 5))
plt.title('Density Plot (Kernel Density Estimate)')
plt.xlabel('X-axis')
plt.ylabel('Density')

# Plot the KDE using seaborn's kdeplot
import seaborn as sns
sns.kdeplot(data, fill=True, color='skyblue', alpha=0.7, linewidth
    =1.5)

plt.show()
```

Results:

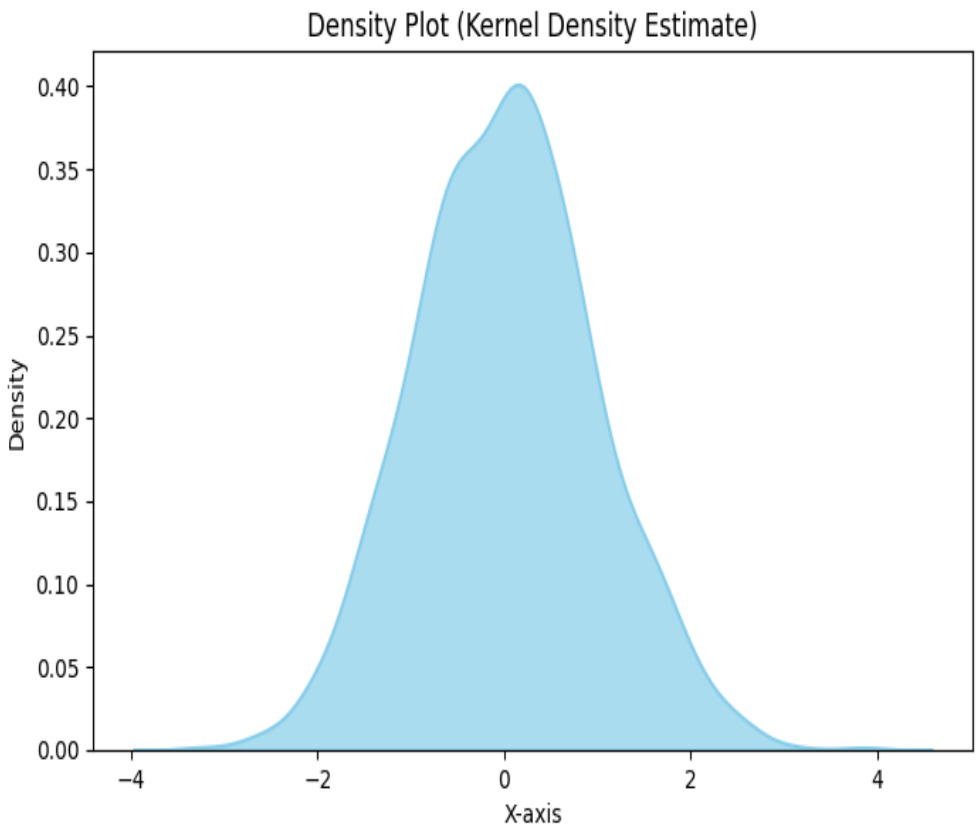

In this example, we use numpy to generate random data following a normal distribution with a mean of 0 and standard deviation of 1. Then, we use seaborn's kdeplot function to create the density plot. The fill=True parameter fills the area under the KDE curve, making it easier to interpret the density at different points.

When you run this code, you should see a density chart representing the kernel density estimate of the random data. The plot will show the smooth curve indicating the density distribution of the data points.

3.3 Histogram

A histogram chart is a graphical representation of data that displays the distribution of a continuous variable. It divides the range of values into a set of intervals, or "bins," and shows the frequency or count of data points falling into each bin. Histograms are especially useful for understanding the shape, central tendency, and spread of a dataset.

Here's how a histogram is created:

1. Data Binning: The range of values for the variable of interest is divided into equal-sized intervals or bins. The number of bins can vary, but it's typically chosen based on the dataset size and the desired level of detail.

2. Frequency Count: The number of data points that fall into each bin is calculated. This is often represented on the vertical axis of the histogram.

3. Bar Representation: Rectangular bars are drawn on the graph, with the width representing the bin's range and the height indicating the frequency or count of data points within that bin.

4. No Gaps: The bars in a histogram are typically drawn adjacent to each other, without any gaps, as the variable is continuous and there is no natural separation between adjacent bins.

Histograms allow you to visualize the distribution of data and identify patterns such as peaks, gaps, and skewness. They provide insights into the spread (variance), central tendency (mean, median), and presence of outliers within a dataset. The shape of the histogram can take various forms, such as normal (bell-shaped), skewed, bimodal (having two peaks), or uniform.

Histograms are commonly used in fields like statistics, data analysis, and data science to explore and understand the characteristics of a dataset and to make informed decisions based on its distribution.

```python
import matplotlib.pyplot as plt
import numpy as np

# Generate a random dataset
data = np.random.randn(1000)

# Create the histogram
plt.hist(data, bins=30, edgecolor='black')

# Set labels and title
plt.xlabel('Value')
plt.ylabel('Frequency')
plt.title('Histogram of Random Data')

# Display the histogram
plt.show()
```

Results:

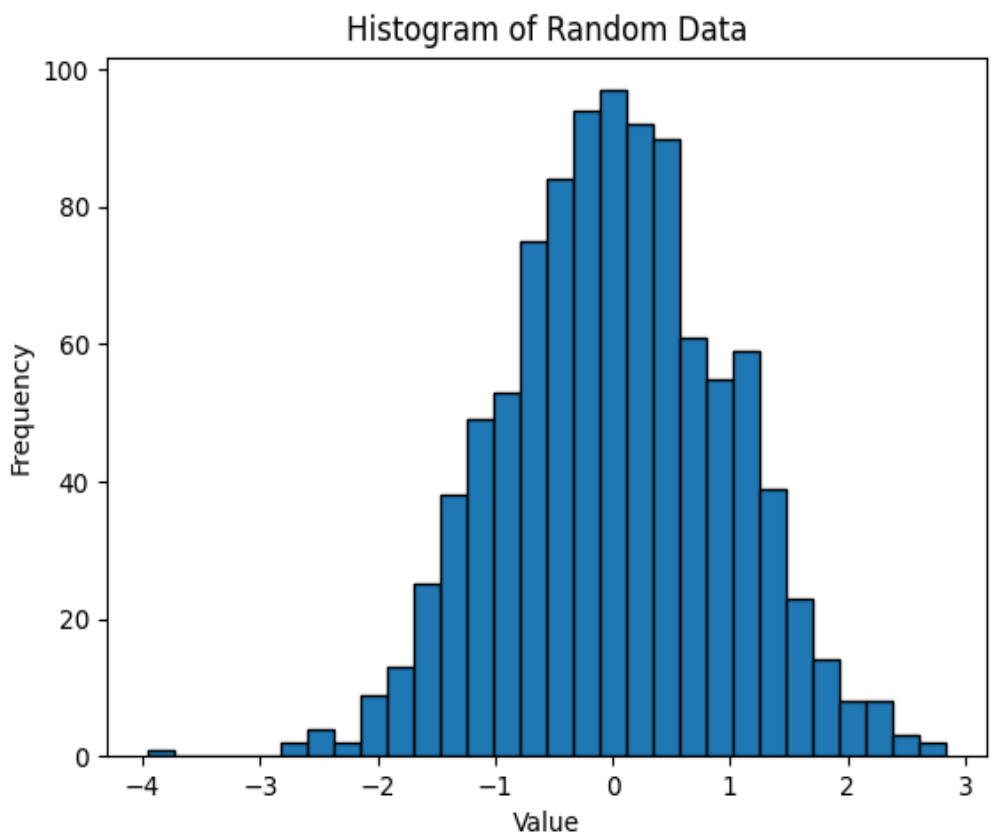

In this example, we first import the necessary libraries: matplotlib for creating the plot and numpy for generating random data. We generate a random dataset of 1000 data points using np.random.randn().

We then create the histogram using the plt.hist() function. The data array is passed as the input, and we specify the number of bins using the bins parameter (in this case, 30 bins). The edgecolor parameter is set to 'black' to add black borders to the bars for better visibility.

We set the x-axis label using plt.xlabel(), the y-axis label using plt.ylabel(), and give the histogram a title using plt.title().

Finally, we display the histogram using plt.show(), which will open a separate window showing the resulting plot.

3.4 Boxplot

A box plot, also known as a box-and-whisker plot, is a statistical visualization tool that provides a summary of a dataset's distribution. It displays key descriptive statistics and highlights the spread and skewness of the data.

Here's a breakdown of the components of a box plot:

1. Median: The box plot includes a line or a dot inside a box, which represents the median of the dataset. The median is the value that divides the data into two equal halves, with 50% of the data points below it and 50% above it.

2. Quartiles: The box itself spans the interquartile range (IQR), which is the middle 50% of the data. The lower edge of the box corresponds to the first quartile (Q1), which marks the 25th percentile of the data. The upper edge of the box corresponds to the third quartile (Q3), marking the 75th percentile.

3. Whiskers: The whiskers extend from the box to indicate the range of the data. By default, the whiskers extend to a length of 1.5 times the IQR. However, they can vary depending on the specific implementation or the presence of outliers. Outliers, which are data points located outside the whiskers, are typically plotted as individual points.

4. Minimum and Maximum: The endpoints of the whiskers represent the minimum and maximum values within the dataset that fall within the acceptable range (1.5 times the IQR by default).

Box plots provide a concise and visual representation of the data distribution, showing the central tendency (median) and the spread (IQR and whiskers) of the dataset. They are useful for identifying outliers, comparing distributions, and detecting skewness. Box plots are commonly used in statistical analysis, exploratory data analysis, and data presentations.

```python
import matplotlib.pyplot as plt
import numpy as np

# Generate some random data
np.random.seed(1)
data = np.random.normal(loc=0, scale=1, size=100)

# Create a box plot
plt.boxplot(data)

# Add a title and labels
plt.title("Box Plot Example")
plt.xlabel("Data")
plt.ylabel("Values")

# Display the plot
plt.show()
```

Results:

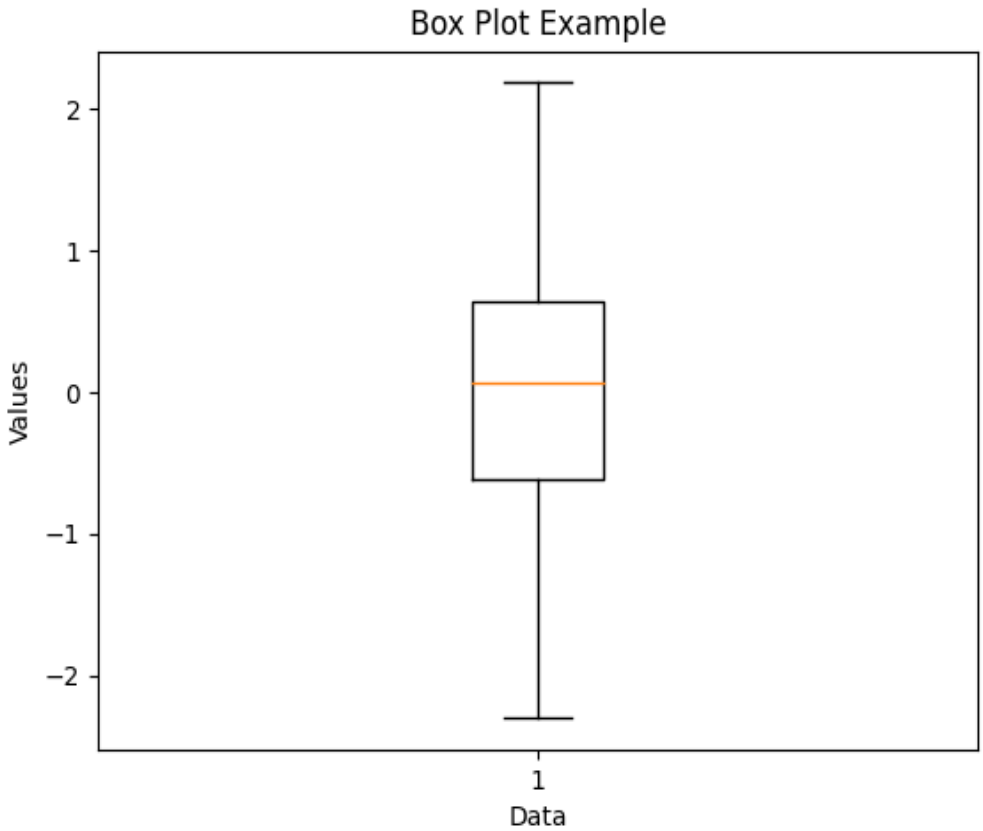

In this example, we first import the necessary libraries, matplotlib and numpy. Then, we generate some random data using np.random.normal() to simulate a dataset. Next, we create the box plot using plt.boxplot(data), where data is the array containing the data points.

We add a title to the plot using plt.title(), and labels for the x-axis and y-axis using plt.xlabel() and plt.ylabel(), respectively.

Finally, we display the plot using plt.show(). Running this code will show a box plot representing the distribution of the randomly generated data.

3.5 Ridgeline

Ridgeline charts, also known as joyplots or density plots, are a type of data visualization that allows you to display the distribution of a numeric variable across multiple categories. They are useful when you want to compare the distribution of data among different groups or time periods.

The main feature of a ridgeline chart is that it stacks multiple density plots vertically, one above the other. Each density plot represents the distribution of the numeric variable for a specific category or group. The plots are aligned along a common horizontal axis, making it easy to compare the shape, spread, and central tendency of the data across different categories.

Ridgeline charts are particularly effective for visualizing how the distribution of a variable changes over time or across different subgroups. By combining multiple density plots in a compact layout, they can reveal patterns and insights that might be challenging to see in other types of graphs.

The name "ridgeline" comes from the ridges formed by the overlapping density plots, creating a distinctive mountain-like appearance. The width and height of the ridges represent the density of data points in that region, with higher density areas appearing wider and more prominent.

Ridgeline charts are not as widely used as other types of graphs like bar charts or scatter plots, but they can be a powerful tool for understanding the distributional characteristics of data when dealing with multiple categories or groups.

```
import seaborn as sns
import matplotlib.pyplot as plt

# Create example data
categories = ['A', 'B', 'C', 'D']
data = {
    'A': np.random.normal(0, 1, 100),
    'B': np.random.normal(1, 1, 100),
    'C': np.random.normal(2, 1, 100),
    'D': np.random.normal(3, 1, 100)
}

# Create a list of dataframes for each category
dfs = [pd.DataFrame({category: data[category]}) for category in
    categories]

# Combine the dataframes into a single dataframe
combined_df = pd.concat(dfs, ignore_index=True)

# Set up the plot
plt.figure(figsize=(10, 6))

# Create the ridgeline plot
sns.histplot(data=combined_df, x="value", hue="variable", multiple=
    "stack", shrink=0.8, kde=True)

# Customize the plot
plt.title('Ridgeline Chart')
```

```
plt.xlabel('Value')
plt.ylabel('Density')
plt.legend(title='Category')

# Show the plot
plt.show()
```

Results:

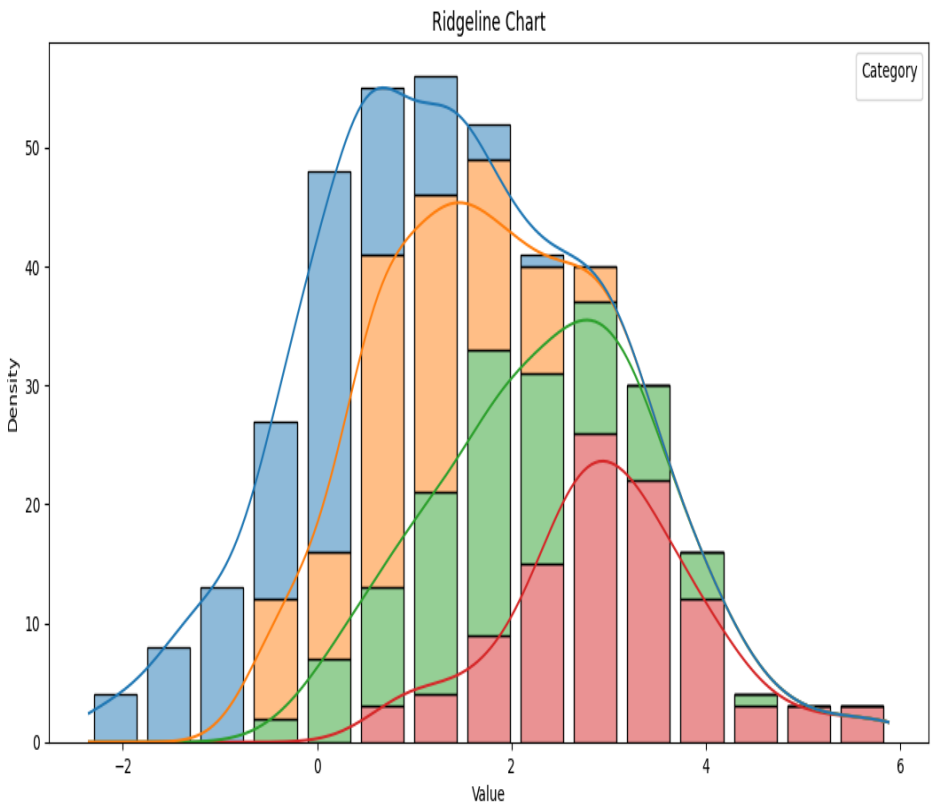

In this example, we generate random data for four categories (A, B, C, D), each following a normal distribution with different mean values. We create a list of dataframes, with each dataframe containing the data for one category. Then, we concatenate the dataframes into a single dataframe.

Using seaborn's histplot function, we create the ridgeline chart by specifying the data, the x-axis variable, the hue (which represents the categories), and enabling the stacked display with multiple="stack". We also include kernel density estimation (KDE) to estimate the smooth density curves.

Finally, we add labels, a legend, and display the plot using plt.show(). You can modify this example by replacing the data with your own dataset and customizing the plot to suit your needs.

3.6 Comparison

1. Box Plot:
   Pros:

   - Provides a clear representation of the distribution's median, quartiles, and outliers.
   - Easily identifies potential extreme values (outliers).
   - Compact and efficient in displaying multiple distributions side by side.
   - Works well with large datasets.

   Cons:

   - Less informative about the underlying data distribution compared to other plots like density plots.
   - Doesn't show the shape of the distribution in detail.

   2. Violin Plot:
   Pros:

   - Combines features of box plots and kernel density plots to provide more detailed information about the data distribution.
   - Shows the probability density at different values, revealing multimodal distributions.
   - Can handle data with different sample sizes effectively.

   Cons:

   - Takes up more space than a box plot, which can be a concern in limited space visualizations.
   - Slightly more complex to interpret than a simple box plot.

   3. Ridgeline Plot:
   Pros:

   - Ideal for visualizing the distribution of a variable across multiple categories.
   - Provides a smooth and aesthetically pleasing representation of density.
   - Can show changes in the distribution over time or other categorical variables.

   Cons:

   - Might be challenging to interpret for those unfamiliar with the plot type.

- Not suitable for comparing detailed statistics like quantiles or specific data points.

4. Histogram:
Pros:

- Shows the underlying distribution of a continuous variable, especially for large datasets.
- Easy to understand and interpret.
- Suitable for identifying gaps and clusters in the data.

Cons:

- The shape of the histogram can be sensitive to the binning method used.
- Binning bias can lead to slightly different interpretations.

5. Density Plot:
Pros:

- Smooth representation of the underlying data distribution.
- Can better visualize the shape of the distribution compared to histograms.
- Useful for identifying peaks and modes in the data.

Cons:

- Requires more computational resources for large datasets.
- Might not be as intuitive to interpret for some users.

In summary, the choice of which plot to use depends on the specific data and the goal of the analysis. Box plots and violin plots are great for comparing distributions and identifying outliers. Histograms are simple and effective for visualizing the general shape of a distribution, while density plots offer a smoother representation. Ridgeline plots are useful for showing the distribution across multiple categories or time points. It's important to consider the data size, complexity, and the audience's familiarity with different plot types when selecting the appropriate visualization.

Chapter 4

Ranking

Ranking charts, also known as leaderboards or top lists, serve as a visual representation of the relative positions of various items, entities, or individuals based on specific criteria. These charts offer a concise and easy-to-understand way to showcase the hierarchical order or popularity of items within a particular context. Ranking charts are commonly employed in a wide range of fields, including sports, entertainment, business, education, and technology, to name a few.

By condensing complex data into a visually appealing format, ranking charts provide viewers with valuable insights at a glance. They play a significant role in conveying the competitive dynamics, trends, and shifts within a given domain. Whether it's the most successful movies at the box office, the top-performing athletes in a sport, the most influential companies in an industry, or even academic institutions based on research output, ranking charts offer a quick and comprehensible overview of the best performers.

The design and presentation of ranking charts vary, but they typically involve a list-style format with items arranged in descending or ascending order based on a specific metric. These metrics can encompass a wide spectrum of factors, such as revenue, audience engagement, user ratings, performance metrics, and more. While ranking charts are valuable tools for decision-making, analysis, and comparison, it's important to consider the underlying criteria and data sources to interpret the information accurately.

In this exploration of ranking charts, we will delve into their significance across diverse sectors, discuss their implications, and explore the art of effectively creating and interpreting these visual representations of hierarchical excellence. Whether you're a data enthusiast, a curious consumer, or a professional seeking insights, understanding the world of ranking charts opens the door to a deeper appreciation of the dynamics that shape various domains of our lives.

4.1 Bar charts

Bar charts are a popular type of graph used for visualizing categorical or discrete data. They display data using rectangular bars of varying lengths, where the length of each bar represents the magnitude or frequency of a particular category or data point.

Here's a step-by-step explanation of how bar charts work:

1. Data Categories: Bar charts are suitable for data that can be divided into distinct categories or groups. For example, you might have data on different types of fruits, sales figures for different months, or survey responses categorized by age groups.

2. Horizontal and Vertical Axes: A bar chart typically has two axes: the vertical (y-axis) and the horizontal (x-axis). The vertical axis represents the measured values or frequencies, while the horizontal axis represents the categories or groups.

3. Bars: The bars in a bar chart are drawn perpendicular to the horizontal axis. The length or height of each bar represents the value or frequency associated with the corresponding category on the horizontal axis.

4. Bar Length: The length of each bar is determined by the magnitude of the data it represents. Longer bars indicate larger values or frequencies, while shorter bars represent smaller values.

5. Bar Width: The width of the bars is usually consistent throughout the chart. It helps maintain uniformity and clarity when comparing the lengths of different bars.

6. Color or Pattern: Bar charts often use different colors or patterns to differentiate between categories or to convey additional information. This can help make the chart visually appealing and easier to interpret.

Bar charts are effective for comparing data across categories and identifying patterns, trends, or disparities. They provide a straightforward and intuitive representation of data, making it easier to understand and draw insights.

```python
import matplotlib.pyplot as plt

# Sample data
categories = ['Apples', 'Oranges', 'Bananas', 'Grapes']
values = [25, 18, 20, 12]

# Creating the bar chart
plt.bar(categories, values)

# Adding labels and title
plt.xlabel('Fruit')
plt.ylabel('Quantity')
plt.title('Fruit Quantity Comparison')

# Displaying the chart
plt.show()
```

Results:

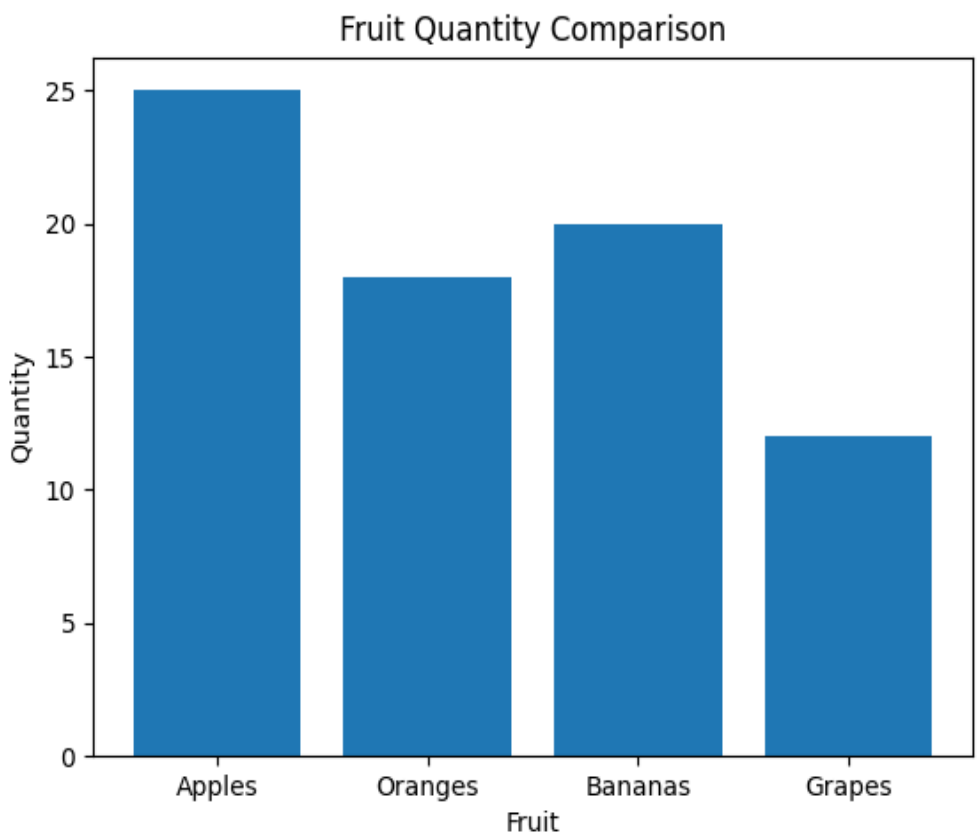

In this example, we have a list of fruit categories (categories) and their corresponding quantities (values). The plt.bar() function is used to create the bar chart, where the categories list is passed as the x-axis values and the values list is passed as the y-axis values.

We then use plt.xlabel(), plt.ylabel(), and plt.title() to add labels and a title to the chart.

Finally, plt.show() displays the bar chart. You can run this code in a Python environment to see the resulting bar chart comparing the quantities of different fruits.

4.2 Lollipop

A lollipop chart, also known as a lollipop plot or a dot plot with lines, is a type of graph used to display and compare values between different categories. It combines elements of both bar charts and scatter plots. The chart consists of markers (usually circles) representing the data points plotted on a horizontal axis, and each marker is connected to a vertical line or stem. The length of the line indicates the value associated with the data point.

Here's a step-by-step explanation of how to interpret a lollipop chart:

1. Categories: The horizontal axis represents the categories or groups being compared. It could be anything from different products, cities, or time periods.

2. Data Points: Each category has a corresponding data point represented by a circle marker on the horizontal axis. The position of the marker along the axis indicates the category it belongs to.

3. Values: The vertical axis represents the values associated with the data points. The scale on the vertical axis varies depending on the range of values being represented.

4. Lines or Stems: A vertical line or stem connects the data point (circle marker) to the corresponding value on the vertical axis. The length of the line indicates the magnitude or size of the value.

Lollipop charts are particularly useful when you want to highlight and compare values within different categories. They provide a clear visual representation of the data points while emphasizing the differences in values using the length of the lines. Additionally, lollipop charts can be easily customized with additional features such as color-coding, labels, or tooltips to enhance the clarity and interpretation of the data.

```
import matplotlib.pyplot as plt
import numpy as np

# Sample data
categories = ['Category A', 'Category B', 'Category C', 'Category D
    ']
values = [15, 10, 7, 12]

# Create a figure and axis
fig, ax = plt.subplots()

# Plot the lollipop chart
ax.vlines(categories, ymin=0, ymax=values, color='skyblue',
    linewidth=3)
ax.scatter(categories, values, color='blue', s=100, zorder=10)

# Set labels and title
ax.set_xlabel('Categories')
ax.set_ylabel('Values')
ax.set_title('Lollipop Chart')

# Rotate category labels if needed
plt.xticks(rotation=45)

# Show the chart
```

```
plt.show()
```

Results:

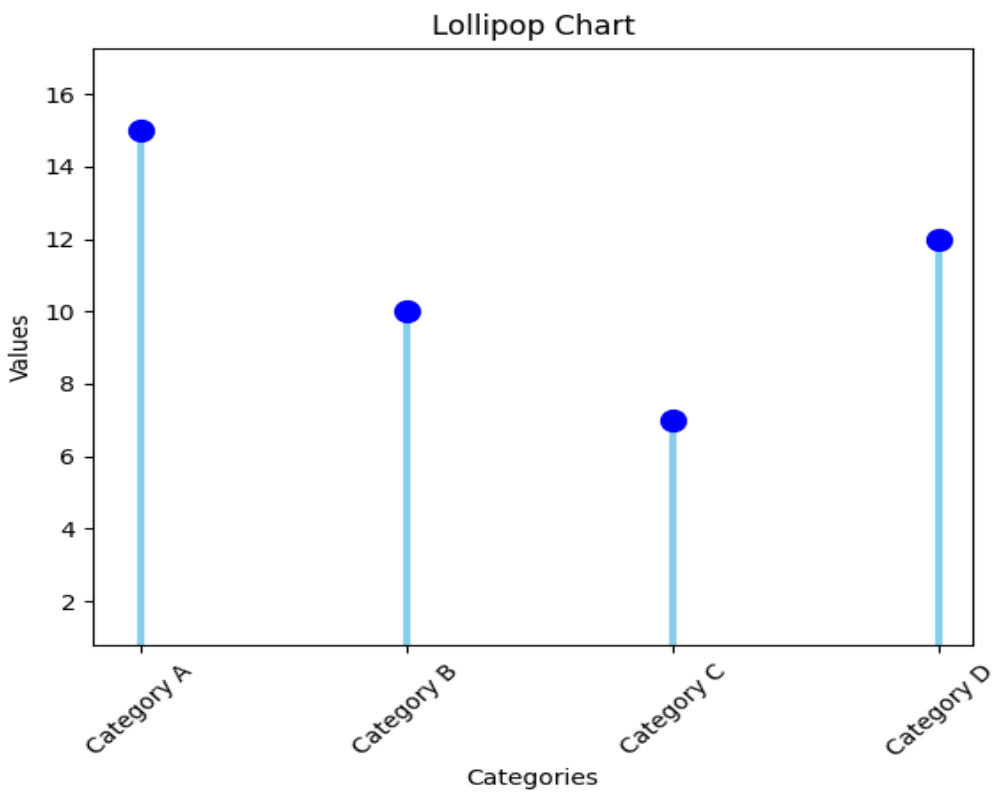

In this example, we have a list of categories (categories) and their corresponding values (values). We create a figure and an axis using plt.subplots(). Then, we use ax.vlines() to draw the vertical lines (stems) from the horizontal axis to the values, and ax.scatter() to plot the circle markers. The colors, line widths, and marker sizes can be customized as per your preference.

Finally, we set the labels for the x-axis, y-axis, and title using ax.set_xlabel(), ax.set_ylabel(), and ax.set_title(), respectively. If the category labels are too long and overlap, you can rotate them using plt.xticks(rotation=45) or adjust the rotation angle as needed.

When you run this code, it will display a lollipop chart showing the values for each category. Feel free to modify the categories and values lists to fit your own data.

4.3 Wordcloud

A word cloud is a visual representation of text data where the size of each word corresponds to its frequency or importance within the text. It provides a quick and intuitive way to visually analyze and understand the most prominent terms in a collection of text.

In a word cloud, words are typically displayed in a randomized arrangement, with more frequently occurring words appearing larger and bolder than less frequent ones. The overall layout and color scheme of a word cloud can vary, but the emphasis is usually on making the word sizes and positions visually distinct.

Word clouds are useful for gaining insights into the key themes, topics, or sentiments present in a body of text. By visually highlighting the most frequently used words, they can help identify patterns, trends, or the main focus of the text. Word clouds are often employed in various contexts, including social media analysis, text mining, content analysis, and summarization.

It's important to note that word clouds have limitations. They do not provide detailed context or semantic relationships between words. The analysis should be accompanied by other techniques to fully understand the underlying meaning and context of the text data.

```python
import matplotlib.pyplot as plt
from wordcloud import WordCloud

# Example text data
text_data = "Hello, how are you? This is an example of a word cloud. Word clouds are fun and informative visualizations."

# Create a WordCloud object
wordcloud = WordCloud(width=800, height=400, background_color='white').generate(text_data)

# Plot the word cloud
plt.figure(figsize=(10, 5))
plt.imshow(wordcloud, interpolation='bilinear')
plt.axis('off')
plt.show()
```

Results:

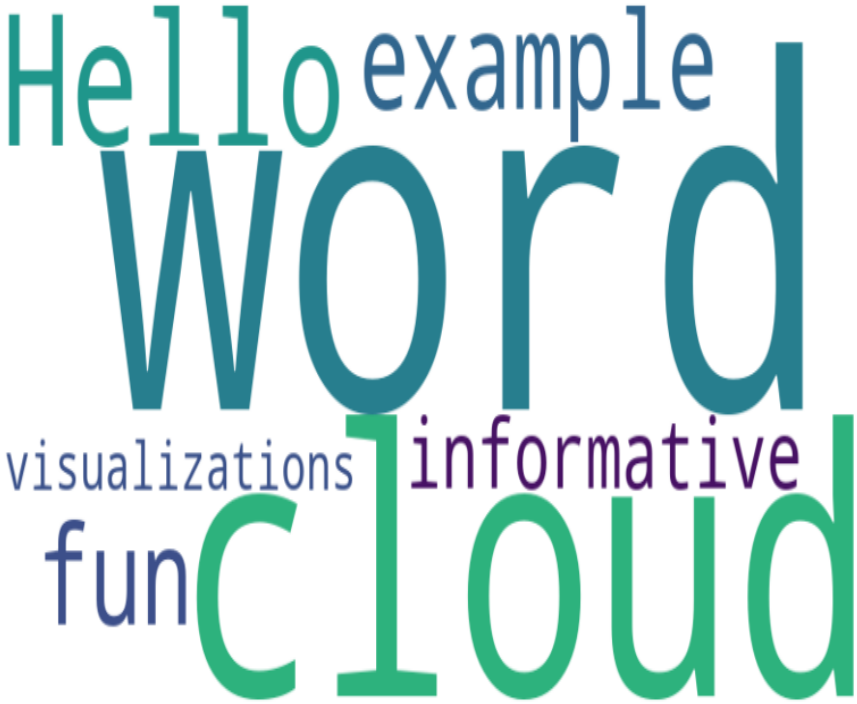

In this example, we start by importing the necessary libraries: matplotlib.pyplot for plotting and WordCloud from the wordcloud library.

Next, we define the text data that we want to visualize as a word cloud. In this case, the text is stored in the text_data variable.

We then create a WordCloud object, specifying the desired width, height, and background color. In this case, we set the width to 800 pixels, height to 400 pixels, and background color to white.

Finally, we plot the word cloud using plt.imshow() and display the resulting visualization using plt.show().

When you run this code, you should see a window pop up displaying the word cloud visualization of the given text data. The size and positioning of the words will reflect their frequency or importance within the text.

4.4 Radar

Radar charts, also known as spider charts or star plots, are a type of data visualization that represents multivariate data in a two-dimensional, circular format. They are particularly useful for comparing multiple variables or data points across different categories or dimensions. Radar charts are called so because the lines connecting the data points radiate from a common center, resembling a spider's web or a star shape.

Here's how radar charts work:

1. Data Points: Each variable or data point is represented by a point on the chart. These points are placed along the individual axes that extend from the center of the chart to the outer edges. The number of axes corresponds to the number of variables being compared.

2. Connecting Lines: Lines are drawn to connect the data points of each variable, creating a polygonal shape. The area enclosed by the lines represents the data's magnitude or value for that specific data point.

3. Multiple Data Sets: Radar charts are especially useful when comparing multiple data sets. Each data set is typically represented by a separate polygonal shape, often with different colors or shading for easy distinction.

4. Normalization: Since radar charts use axes with different scales, it is essential to normalize the data to ensure fair comparisons. Normalization involves scaling the data points so that they fall within a standard range (e.g., 0 to 1) to remove any bias caused by different scales.

Radar charts are useful for quickly identifying patterns, similarities, and differences between data sets. They are commonly used in fields like market research, sports analytics, and performance evaluations, where multiple metrics need to be compared simultaneously. However, it's essential to be cautious when using radar charts, as the interpretation can become challenging when dealing with complex data or numerous variables. In such cases, other visualization types like parallel coordinate plots or stacked bar charts might be more appropriate.

```
import matplotlib.pyplot as plt
import numpy as np

# Sample data for three variables
categories = ['Category 1', 'Category 2', 'Category 3', 'Category 4
    ', 'Category 5']
data_set1 = [4, 2, 3, 5, 1]
data_set2 = [3, 5, 2, 4, 3]

# Calculate angle for each category
angles = np.linspace(0, 2 * np.pi, len(categories), endpoint=False)
    .tolist()
angles += angles[:1]  # Repeat the first angle to close the chart

# Plotting the radar chart
fig, ax = plt.subplots(figsize=(6, 6), subplot_kw={'polar': True})
ax.plot(angles, data_set1, label='Data Set 1')
```

```
ax.fill(angles, data_set1, alpha=0.25)  # Fill the area enclosed by
    the lines

ax.plot(angles, data_set2, label='Data Set 2')
ax.fill(angles, data_set2, alpha=0.25)  # Fill the area enclosed by
    the lines

# Customize the chart
ax.set_xticks(angles[:-1])
ax.set_xticklabels(categories)
ax.yaxis.grid(True)
ax.legend()

# Show the chart
plt.show()
```

Results:

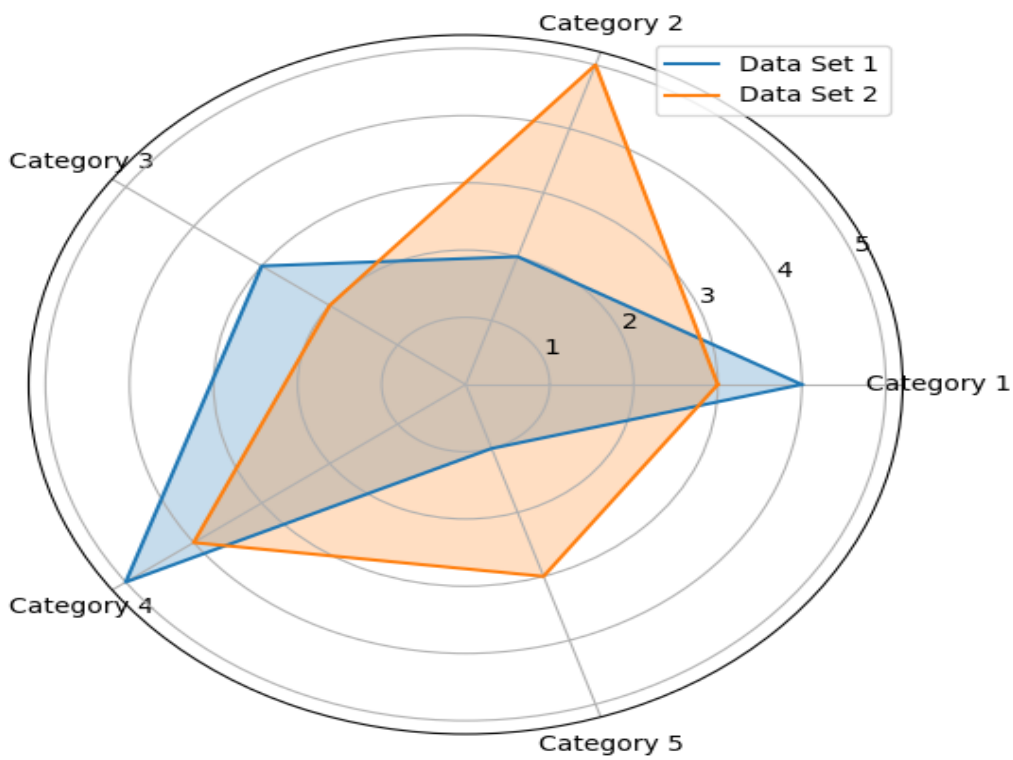

In this example, we define two data sets (data_set1 and data_set2) representing values for different categories. We calculate the angles for each category to evenly distribute them around the circular chart. Then, we create a subplots object with a polar projection and plot the data using ax.plot. The ax.fill func-

tion fills the area enclosed by the lines of each data set. Finally, we customize the chart by setting the category labels, adding a grid, and displaying a legend.

You can modify the categories, data_set1, and data_set2 variables to match your own data. By running this code, you should be able to generate a radar chart using Matplotlib in Python.

4.5 Comparison

1. Bar Chart:
   Pros:

   - Easy to understand: Bar charts are simple and effective visualizations that display data in rectangular bars. They are easy for most people to interpret and understand quickly.
   - Suitable for discrete data: Bar charts work well for representing discrete categories or groups of data, making them suitable for comparing different items or categories.
   - Versatile: Bar charts can be used for various types of data, including categorical and numerical data.
   - Supports comparison: Bar charts allow easy comparison between different data points, helping identify trends and patterns.

   Cons:

   - Limited for continuous data: Bar charts might not be the best choice for continuous data with a large number of unique values since each value would require its own bar, making the chart cluttered and difficult to read.
   - Lack of precision: Bar charts do not provide precise data points, which can be an issue when dealing with highly specific data.

   2. Lollipop Chart:
   Pros:

   - Combines advantages of bar and dot plots: Lollipop charts merge the benefits of bar charts and dot plots, making it easier to show individual data points while still maintaining a visual connection between the data and its corresponding axis.
   - Attractive visualization: Lollipop charts are visually appealing and can effectively convey data in a more engaging manner.

   Cons:

   - Limited use cases: Lollipop charts might not be as versatile as other chart types and are more suitable for specific scenarios where individual data points need to be emphasized.
   - Potentially cluttered: If there are too many data points, the lollipop chart can become cluttered and harder to interpret.

   3. Wordcloud:
   Pros:

- Visualizes text data: Word clouds are useful for representing text data by displaying words in different sizes based on their frequency or importance.
- Quick insights: Word clouds offer a quick and visually appealing way to identify prominent words in a text, making it easier to understand the main topics or themes.
- Ideal for presentations: Word clouds are often used in presentations and reports to make them more visually engaging.

Cons:

- Ignores context: Word clouds only show individual words' frequency without considering the context or relationships between words, potentially oversimplifying the data.
- Subjective interpretation: The size and prominence of words in a word cloud can be influenced by design choices, making it somewhat subjective.

4. Radar Chart (Spider Chart):
Pros:

- Visualizes multivariate data: Radar charts are ideal for comparing multiple variables simultaneously, making them suitable for displaying patterns and trends across different data points.
- Useful for performance analysis: Radar charts are commonly used to evaluate performance in various areas, such as skills assessment or product feature comparison.
- Highlights strengths and weaknesses: The visual layout of radar charts makes it easy to identify strengths and weaknesses across different variables.

Cons:

- Complex interpretation: Radar charts can be more challenging to interpret compared to simpler chart types like bar charts or line graphs, especially when there are multiple data sets with overlapping lines.
- Data scaling: The scaling of axes can significantly impact the chart's appearance and interpretation, potentially leading to misleading conclusions if not done properly.

Each type of chart serves different purposes and has its strengths and weaknesses. The choice of the chart depends on the specific data you want to visualize and the insights you wish to convey. Consider the nature of your data and the story you want to tell when selecting the appropriate chart type.

Chapter 5

Spatial

In today's data-driven world, effective communication of information is essential for decision-making, analysis, and understanding complex relationships. Spatial charts, a dynamic and innovative tool in data visualization, play a pivotal role in presenting geographical and location-based data in a comprehensible and insightful manner.

Spatial charts transform raw data points into visually appealing and interactive representations, allowing individuals to explore patterns, trends, and correlations that may not be immediately evident in traditional tabular formats. These charts amalgamate the power of visual design with the significance of geographic context, providing a holistic view of data across different regions and areas.

Whether you're dealing with demographic trends, economic indicators, environmental factors, or any other data with geographic relevance, spatial charts empower users to uncover deeper insights and draw informed conclusions. With the advent of advanced mapping technologies and the integration of real-time data, spatial charts have evolved into sophisticated tools that cater to a wide range of industries, including urban planning, business analytics, epidemiology, and more.

In this exploration of spatial charts, we will delve into their various types, benefits, and applications, highlighting their role in simplifying complex data landscapes and enabling more informed decision-making. From choropleth maps that vividly display data across different regions to heat maps that depict density variations, spatial charts offer a captivating journey into the world of data visualization and geographical analysis.

5.1 Choropleth maps

Choropleth maps are a type of spatial visualization that represent data using different colors or patterns to depict variations across geographic regions, such as countries, states, or counties. The term "choropleth" comes from the Greek words "choros" (region) and "plethos" (multitude).

In a choropleth map, regions are shaded or colored based on a particular data variable or attribute. The intensity or darkness of the color indicates the magnitude or value of that variable within each region. This allows for a quick visual comparison of the data across different regions.

Here's a simplified example to help illustrate the concept: Let's say you have a choropleth map of a country, and you want to visualize the population density of different states. You would assign a color spectrum, such as lighter colors for lower population density and darker colors for higher population density. Each state would be filled with a color corresponding to its population density value, allowing viewers to easily identify regions with high or low population concentration.

Choropleth maps are commonly used to represent various types of data, such as demographic information, socioeconomic indicators, election results, and environmental factors. They provide an effective way to communicate spatial patterns and disparities, making it easier to understand and compare data across different geographic areas.

```
from urllib.request import urlopen
import json
with urlopen('https://raw.githubusercontent.com/plotly/datasets/master/geojson-counties-fips.json') as response:
    counties = json.load(response)

import pandas as pd
df = pd.read_csv("https://raw.githubusercontent.com/plotly/datasets/master/fips-unemp-16.csv",
                    dtype={"fips": str})

import plotly.express as px

fig = px.choropleth(df, geojson=counties, locations='fips', color='unemp',
                            color_continuous_scale="Viridis",
                            range_color=(0, 12),
                            scope="usa",
                            labels={'unemp':'unemployment rate'}
                          )
fig.update_layout(margin={"r":0,"t":0,"l":0,"b":0})
fig.show()
```

Results:

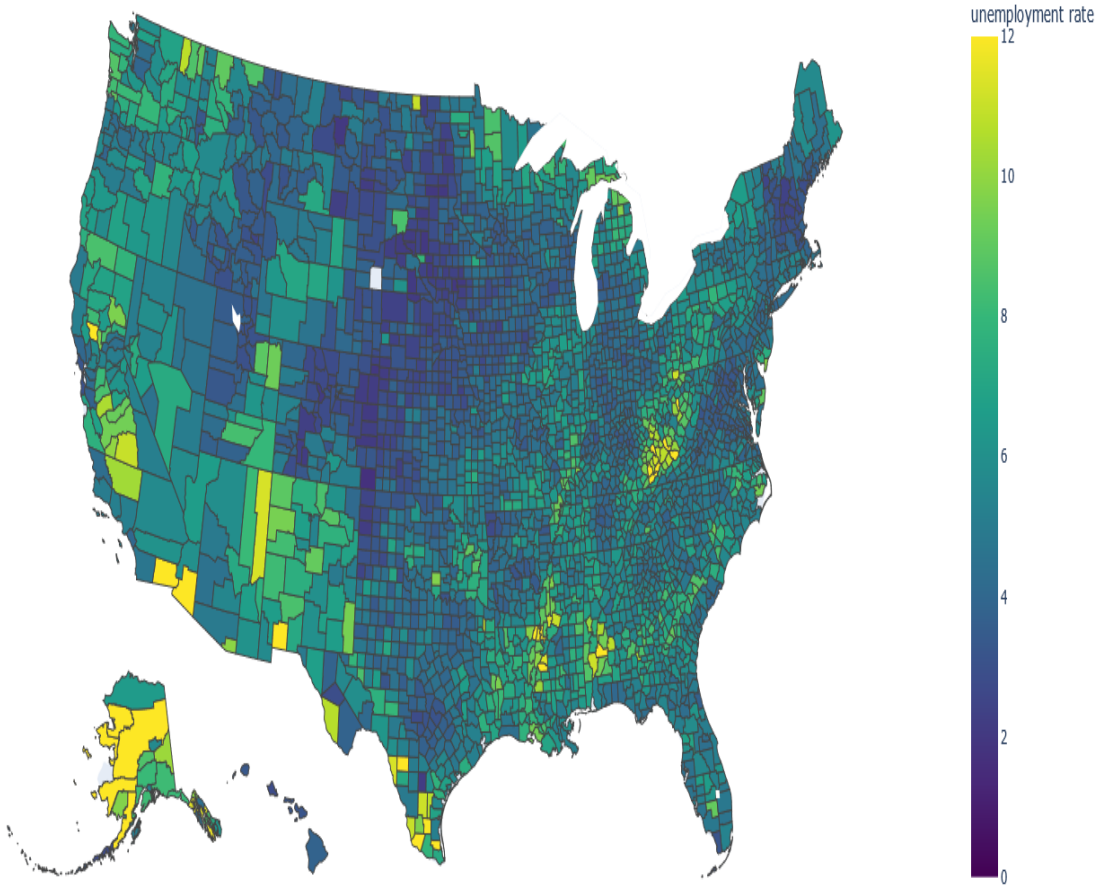
unemployment rate
12
10
8
6
4
2
0

5.2 Bubble maps

Bubble maps, also known as proportional symbol maps, are a type of spatial visualization that represents data using bubbles or circles placed on a map. Each bubble represents a specific location or geographic area, and its size is proportional to a particular numerical value or attribute associated with that location.

Bubble maps are effective in visualizing data that has a geographic component and a quantitative aspect. They provide a quick and intuitive way to compare values across different locations and identify spatial patterns or disparities.

The key characteristics of bubble maps include:

1. Location: Bubble maps are geographically based, with bubbles placed at specific coordinates on a map corresponding to their respective locations.

2. Size: The size of each bubble represents a quantitative variable. For example, the population of a city, the sales revenue of a store, or the number of COVID-19 cases in a region.

3. Color: In addition to size, bubbles can be further enhanced by color coding to convey an additional data dimension. For example, the color of a bubble could indicate a different attribute or category.

By visualizing data as bubbles on a map, bubble maps allow for a quick assessment of spatial distribution and concentration. They can reveal clusters, outliers, and gradients, enabling viewers to identify areas of interest or potential relationships between variables. This type of visualization is commonly used in fields such as geography, demographics, business analytics, and public health, among others.

```python
import matplotlib.pyplot as plt

# Sample data
cities = ['New York', 'Los Angeles', 'Chicago', 'Houston', 'Phoenix']
latitudes = [40.7128, 34.0522, 41.8781, 29.7604, 33.4484]
longitudes = [-74.0060, -118.2437, -87.6298, -95.3698, -112.0740]
populations = [8.4, 3.9, 2.7, 2.3, 1.7]  # in millions

# Create the figure and axis
fig, ax = plt.subplots()

# Plot the bubbles
ax.scatter(longitudes, latitudes, s=populations * 100, alpha=0.7, c='blue', edgecolors='black')

# Add labels to the bubbles
for i, city in enumerate(cities):
    ax.annotate(city, (longitudes[i], latitudes[i]), ha='center', va='center', fontsize=8)

# Set the axis labels and title
ax.set_xlabel('Longitude')
ax.set_ylabel('Latitude')
ax.set_title('Bubble Map of City Populations')
```

```

# Display the map
plt.show()
```

Results:

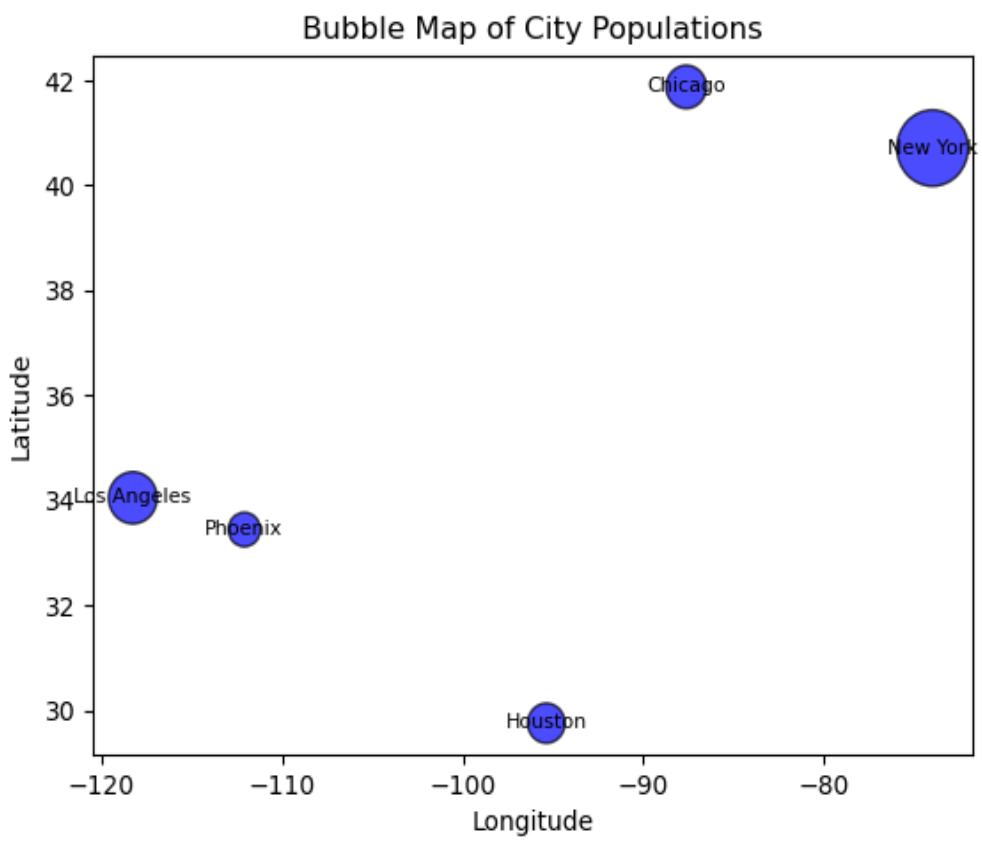

In this example, we create a bubble map representing the populations of five cities: New York, Los Angeles, Chicago, Houston, and Phoenix. The latitude and longitude coordinates of each city are provided along with their respective populations. The size of each bubble is determined by the population, and the bubbles are colored blue with black borders.

The scatter function from Matplotlib is used to plot the bubbles on a Cartesian coordinate system. The s parameter is set to populations * 100 to scale the bubble sizes appropriately. The alpha parameter controls the transparency of the bubbles.

We also add labels to each bubble using the annotate function, placing the city names at their corresponding coordinates.

Finally, we set the axis labels and title using the set_xlabel, set_ylabel, and set_title functions.

Running this code will generate a bubble map displaying the cities as bubbles, with the size representing their populations.

5.3 Heatmaps

Heatmaps (geographical), also known as density maps, are a type of data visualization that represent the density or intensity of a particular phenomenon or data variable across a geographic area. They use colors or shading to indicate the relative concentration or distribution of the data values within a given region.

In a heatmap, each area or region on a map is divided into smaller units, such as grid cells or polygons. The color or shading of each unit corresponds to the magnitude or density of the data being visualized. Higher values or densities are typically represented by warmer colors like red or orange, while lower values or densities are represented by cooler colors like blue or green.

Heatmaps can be used to display a wide range of information. For example, they can depict population density, crime rates, average temperature, air pollution levels, or any other variable that can be measured and associated with a geographic location.

Heatmaps are effective in revealing patterns, clusters, and variations in the data across the geographical area. They allow viewers to quickly identify areas of high or low concentration and observe spatial trends or correlations. By using colors to represent data intensity, heatmaps make it easier to understand complex geographic patterns and make informed decisions based on the visualized information.

```python
import matplotlib.pyplot as plt
import numpy as np

# Generate random data for demonstration
# Replace this with your actual data
data = np.random.rand(10, 10)  # Example: 10x10 grid

# Create a heatmap
plt.imshow(data, cmap='hot', interpolation='nearest')

# Add a colorbar for reference
plt.colorbar()

# Set x and y axis labels (optional)
plt.xlabel('X-axis')
plt.ylabel('Y-axis')

# Set a title for the heatmap
plt.title('Geographical Heatmap')

# Display the heatmap
plt.show()
```

Results:

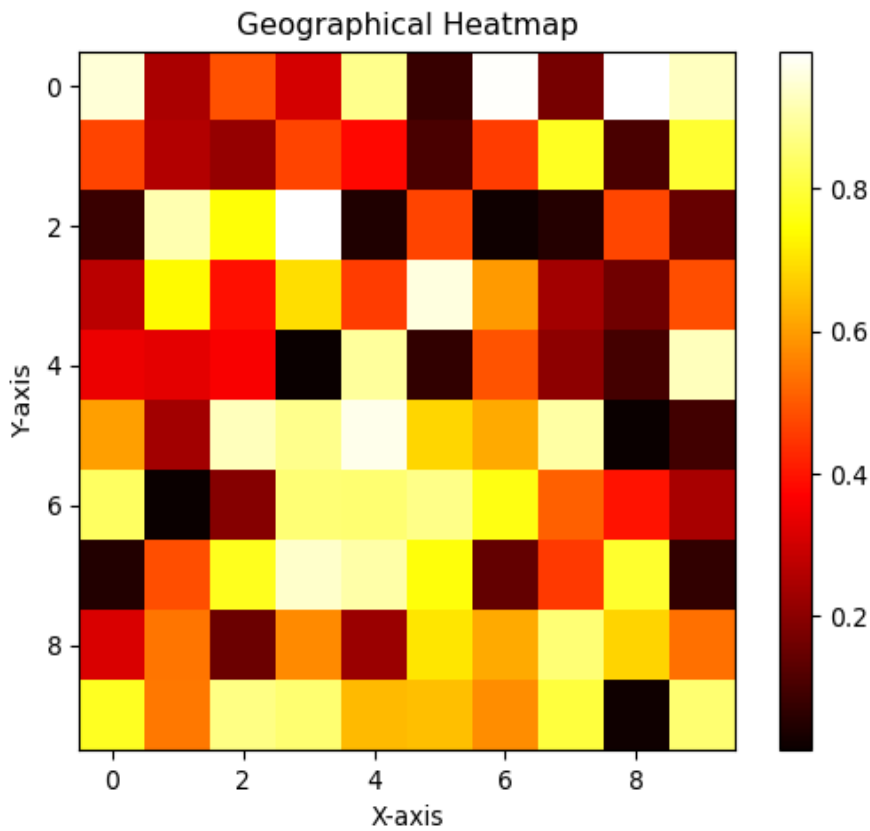

In this example, we first import the necessary libraries, matplotlib and numpy. Then, we generate a random 10x10 grid of data using np.random.rand(10, 10). You would replace this line with your actual data.

Next, we use plt.imshow() to create the heatmap. We specify the colormap (cmap) as 'hot', which ranges from dark (low values) to light (high values). The interpolation parameter determines how the colors are interpolated between the data points.

We add a colorbar using plt.colorbar() to provide a visual reference for the data values. Optionally, you can set x and y axis labels using plt.xlabel() and plt.ylabel(). Finally, we set a title for the heatmap using plt.title().

Finally, we display the heatmap using plt.show().

5.4 Flow maps

Flow maps are a type of spatial visualization that depict the movement or flow of objects, people, goods, or information between different locations or regions. They provide a visual representation of the paths and volumes of movement, helping to understand the spatial patterns and connections between origins and destinations.

Flow maps typically use lines or arrows to indicate the flow between locations. The width or thickness of the lines or arrows can represent the volume or magnitude of the flow. For example, a thicker line may indicate a higher volume of goods being transported between two cities.

One of the key features of flow maps is that they emphasize the directional nature of movement. Arrows or lines often have specific start and end points, showing the origin and destination of the flow. This directional information is crucial in understanding the interactions and relationships between different regions.

Flow maps can be used to visualize various types of movements, such as migration patterns, trade routes, transportation networks, or communication flows. They can provide insights into the connections between different regions, identify transportation bottlenecks, analyze the impact of infrastructure changes, or help plan logistics and resource allocation.

By using flow maps, complex movement patterns can be simplified and communicated effectively, allowing viewers to grasp the spatial relationships and dynamics of the flows at a glance.

```
import matplotlib.pyplot as plt
import numpy as np

# Generate random flow data
num_flows = 50
x = np.random.rand(num_flows)  # X-coordinate of flow start points
y = np.random.rand(num_flows)  # Y-coordinate of flow start points
dx = np.random.randn(num_flows) * 0.1  # X-component of flow vectors
dy = np.random.randn(num_flows) * 0.1  # Y-component of flow vectors
flows = np.column_stack([x, y, dx, dy])  # Combine flow data

# Create a scatter plot to represent flow start points
plt.scatter(x, y, color='blue', alpha=0.5)

# Add flow lines to the plot
for flow in flows:
    plt.arrow(flow[0], flow[1], flow[2], flow[3], color='red', alpha=0.3,
              head_width=0.02, head_length=0.02)

# Set plot title and axis labels
plt.title('Flow Map')
plt.xlabel('X-coordinate')
plt.ylabel('Y-coordinate')

```

```
# Set plot limits
plt.xlim(0, 1)
plt.ylim(0, 1)

# Display the plot
plt.show()
```

Results:

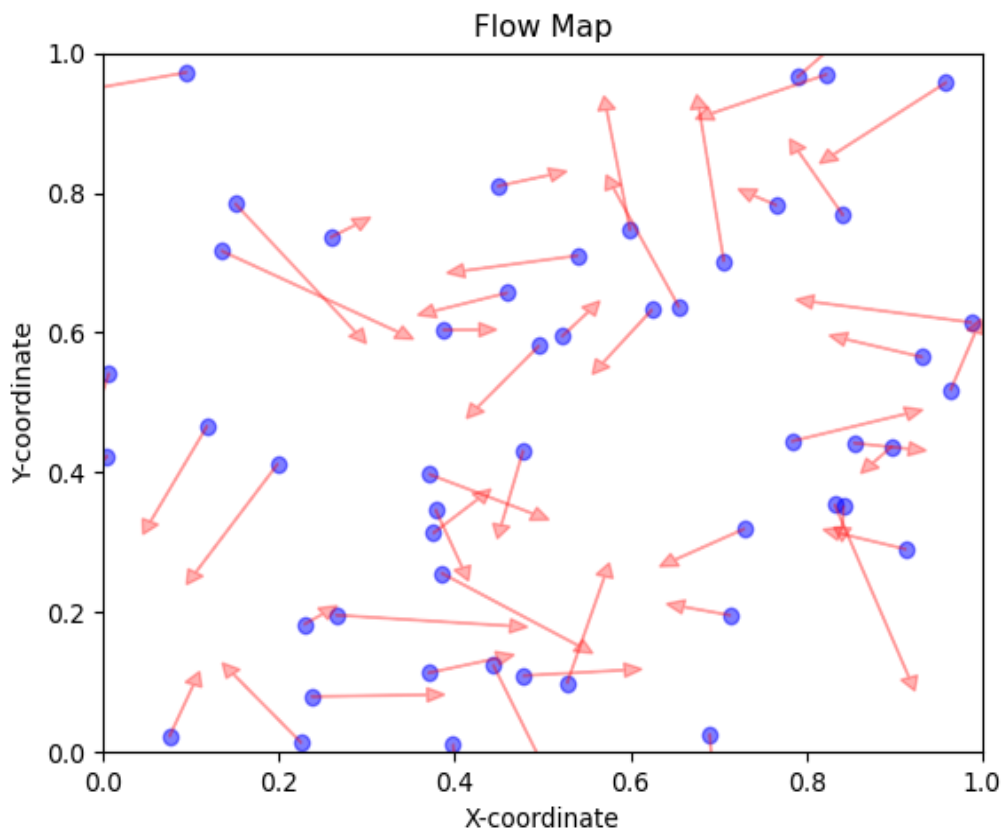

In this example, we first generate random flow data consisting of start points (x and y coordinates) and flow vectors (dx and dy components). We then use Matplotlib to create a scatter plot to represent the start points as blue dots, and arrows are added to represent the flows using the arrow() function. The plot is then customized with a title, axis labels, and limits before being displayed using plt.show().

Note that this is a basic example, and you can customize the visualization further by adjusting colors, line styles, arrow sizes, or incorporating real data to create more meaningful flow maps.

5.5 Comparison

1. Choropleth Map:
   Pros:

   - Clear visualization: Choropleth maps use different colors or shading to represent data values, making it easy to understand spatial patterns and variations.
   - Ideal for discrete data: They work well when data is divided into discrete regions (e.g., countries, states) and allows for easy comparisons.
   - Highlighting regional differences: Choropleth maps can effectively highlight disparities in data across geographic regions.

   Cons:

   - Misleading representation: Choropleth maps can be misleading when areas have vastly different sizes, as larger regions may dominate the visualization.
   - Limited precision: Choropleth maps can only represent data at the regional level and may not capture finer-scale spatial patterns.
   - Data classification bias: The choice of classification method can significantly impact the interpretation of the map, leading to potential bias.

   2. Bubble Map:
   Pros:

   - Visualizing multiple variables: Bubble maps can represent multiple dimensions of data simultaneously using different bubble sizes and colors.
   - Effective for point-based data: They are suitable for displaying data associated with specific points (e.g., cities, landmarks).
   - Encourages comparison: Bubble maps allow viewers to compare data across locations easily.

   Cons:

   - Limited to discrete points: Bubble maps are less effective for showing continuous data across continuous regions.
   - Cluttered representation: With too many bubbles or overlapping points, the map can become cluttered and challenging to interpret.
   - Scale variations: The size of bubbles can lead to visual misinterpretations if not scaled properly.

   3. Flow Map:
   Pros:

- Visualizing movement and connectivity: Flow maps show the movement of people, goods, or information between locations, making them ideal for representing migration, trade, or traffic patterns.
- Highlighting paths and direction: They emphasize the directional flow between locations, aiding in understanding spatial connections.
- Capturing spatial relationships: Flow maps reveal spatial relationships and can help identify bottlenecks and congestion points.

Cons:

- Complex data representation: Flow maps can become visually complex, especially with a large number of flows, making it challenging to interpret.
- Distortion issues: Representing long-distance flows alongside short-distance flows can lead to visual distortion.
- Generalization of routes: Flow maps often require simplification of routes, which may not accurately represent real-world paths.

4. Heatmap:
Pros:

- Density representation: Heatmaps effectively display the density or intensity of data over a continuous space, revealing hotspots and clusters.
- Smooth visualization: They provide a smooth representation, reducing the impact of individual data points on the overall visualization.
- Suitable for continuous data: Heatmaps are useful for visualizing continuous data across the entire geographic extent.

Cons:

- Loss of individual data points: Heatmaps aggregate data, leading to the loss of individual point information.
- Interpretation challenges: Without proper legend or context, interpreting the actual data values represented by the colors can be difficult.
- Sensitive to data distribution: Heatmaps can be sensitive to data distribution and can be influenced by outliers or data bias.

Chapter 6

Correlation

Correlation charts are powerful tools used in data analysis and visualization to understand the relationship between two or more variables. These charts provide valuable insights into how changes in one variable might impact another, aiding in the identification of patterns, trends, and potential causal connections within a dataset. Correlation charts play a crucial role in various fields, including statistics, economics, social sciences, and more, enabling researchers, analysts, and decision-makers to make informed conclusions and predictions.

In essence, correlation charts visually represent the degree and direction of association between variables. They help answer questions such as: Does an increase in one variable lead to a corresponding increase or decrease in another? Are two variables related in a linear fashion, or is there a more complex connection between them? By presenting data in an accessible graphical format, correlation charts facilitate the communication of complex ideas and findings to both technical and non-technical audiences.

In this exploration of correlation charts, we will delve into different types of correlation, such as positive and negative correlations, linear and nonlinear relationships, and examine various types of charts commonly used to represent correlations, such as scatter plots, correlation matrices, and correlation heatmaps.

6.1 Scatter plots

A scatter plot is a type of graph used to display the relationship between two continuous variables. It visually represents the correlation or pattern between these variables. The graph consists of a horizontal x-axis that represents one variable and a vertical y-axis that represents the other variable.

In a scatter plot, each data point is plotted as a single dot or marker on the graph, with its position determined by the values of the two variables it represents. The x-coordinate of a data point corresponds to the value of one variable, while the y-coordinate corresponds to the value of the other variable.

By examining the distribution and clustering of the data points on the scatter plot, you can gain insights into the relationship between the variables. The general patterns that can be observed in scatter plots include:

1. Positive correlation: The data points tend to form an upward sloping pattern from left to right, indicating that as one variable increases, the other variable tends to increase as well.

2. Negative correlation: The data points tend to form a downward sloping pattern from left to right, indicating that as one variable increases, the other variable tends to decrease.

3. No correlation: The data points appear to have no discernible pattern or relationship, scattered randomly across the graph.

Scatter plots are especially useful for identifying outliers, clusters, or trends in the data. They are commonly used in various fields such as statistics, data analysis, and scientific research to explore relationships and discover insights between two continuous variables.

```
import matplotlib.pyplot as plt

# Sample data
x = [1, 2, 3, 4, 5, 6, 7, 8, 9, 10]  # Values for the x-axis
y = [3, 5, 2, 8, 6, 9, 4, 7, 1, 2]   # Values for the y-axis

# Create a scatter plot
plt.scatter(x, y)

# Add labels and title
plt.xlabel('X-axis')
plt.ylabel('Y-axis')
plt.title('Scatter Plot Example')

# Display the plot
plt.show()
```

Results:

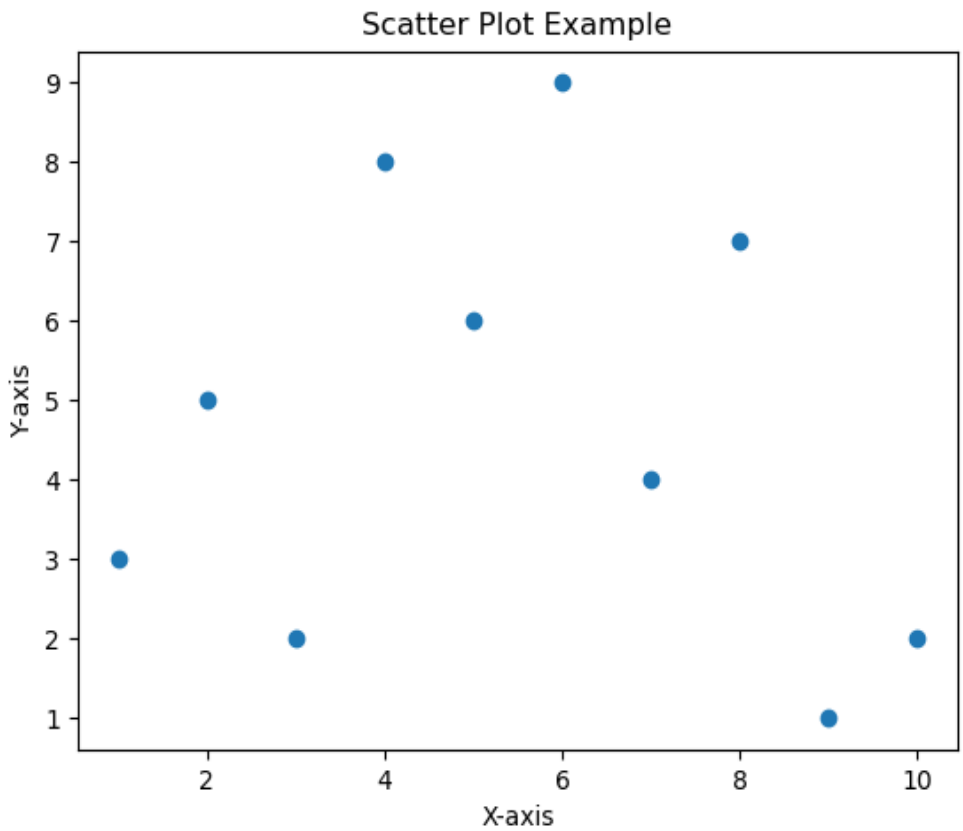

In this example, we create a scatter plot using the scatter() function from Matplotlib. We provide two lists, x and y, which represent the values for the x-axis and y-axis, respectively. The scatter() function plots the data points on the graph.

We then add labels to the x-axis and y-axis using xlabel() and ylabel() functions, respectively. Finally, we set a title for the plot using the title() function.

To display the scatter plot, we use show() function. When you run this code, a window will appear showing the scatter plot with the provided data points.

6.2 Correlation matrices

A correlation matrix is a type of visual representation that displays the correlations between multiple variables in a tabular form. It provides a convenient way to examine the relationships and patterns among different pairs of variables in a dataset.

In a correlation matrix, each variable is listed both in the rows and columns of a square matrix. The diagonal elements of the matrix represent the correlation of each variable with itself, which is always 1 since a variable perfectly correlates with itself. The off-diagonal elements represent the pairwise correlations between different variables.

The correlation values in the matrix range from -1 to 1. A correlation coefficient of 1 indicates a perfect positive correlation, meaning that the variables move in the same direction. A correlation coefficient of -1 indicates a perfect negative correlation, where the variables move in opposite directions. A correlation coefficient of 0 suggests no linear relationship between the variables.

The correlation matrix is often visually enhanced by using color gradients or shading to highlight the strength and direction of the correlations. For example, a darker color or a different hue might be used to indicate stronger positive or negative correlations, while a lighter color or no color might represent weaker correlations or no correlation at all.

Correlation matrices are useful for identifying relationships and dependencies between variables. They are commonly employed in fields such as statistics, finance, social sciences, and data analysis to explore patterns, detect multicollinearity (high intercorrelations), and guide decision-making based on the strength and direction of associations between variables.

```python
import pandas as pd
import seaborn as sns
import matplotlib.pyplot as plt

# Create a sample dataframe
data = {
    'Variable1': [1, 2, 3, 4, 5],
    'Variable2': [5, 4, 3, 2, 1],
    'Variable3': [1, 3, 5, 2, 4],
    'Variable4': [2, 2, 2, 2, 2]
}

df = pd.DataFrame(data)

# Compute the correlation matrix
correlation_matrix = df.corr()

# Plot the correlation matrix using seaborn
sns.heatmap(correlation_matrix, annot=True, cmap='coolwarm')
plt.title('Correlation Matrix')
plt.show()
```

Results:

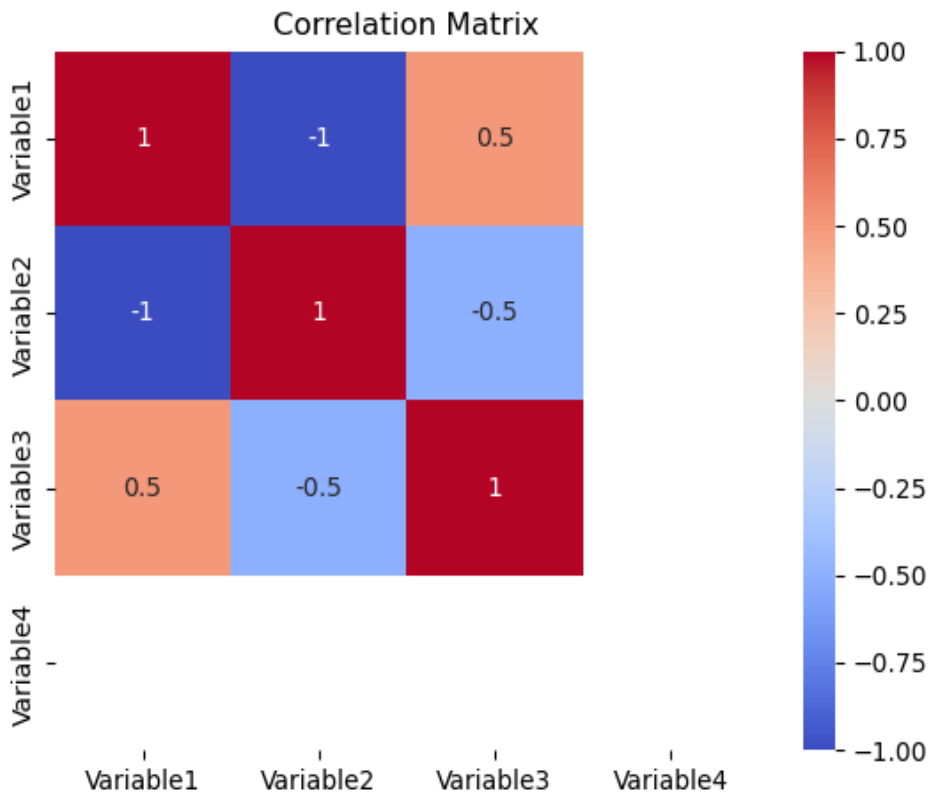

In this example, we create a sample dataframe df with four variables: Variable1, Variable2, Variable3, and Variable4. We then calculate the correlation matrix using the corr() function provided by pandas. Finally, we visualize the correlation matrix using seaborn's heatmap() function, which creates a color-coded representation of the correlations. The annot=True argument adds the correlation values to the cells, and cmap='coolwarm' sets the color map for the heatmap.

6.3 Parallel coordinate plots

A parallel coordinate plot, also known as a parallel coordinates chart or parallel coordinates plot, is a type of visualization that allows you to explore relationships between multiple variables or dimensions simultaneously. It is particularly useful when working with datasets that have many variables.

In a parallel coordinate plot, each variable is represented by a vertical axis or line, and these axes are placed parallel to each other. The values of each variable are then plotted as connected points or lines across these axes. The data points are connected by line segments, creating a series of parallel lines that run across the chart.

To interpret the plot, you follow the lines as they intersect or cross the axes. The position of a data point on each axis indicates the value of that variable for that particular data point. By observing the pattern of lines and their intersections, you can identify relationships, trends, or patterns across multiple variables.

Parallel coordinate plots are especially useful for identifying correlations, spotting outliers, and understanding the distribution and behavior of data across multiple dimensions. They are commonly used in fields such as data analysis, multivariate analysis, and data mining to gain insights into complex datasets.

By visually representing multiple variables in parallel, these plots provide a way to explore and compare data points across dimensions, allowing analysts to make more informed decisions and discoveries from the data.

```
import pandas as pd
import matplotlib.pyplot as plt

# Sample data
data = {
    'Variable1': [1, 2, 3, 4, 5],
    'Variable2': [3, 1, 5, 2, 4],
    'Variable3': [2, 4, 1, 5, 3],
    'Variable4': [4, 5, 3, 1, 2]
}

# Create a pandas DataFrame from the data
df = pd.DataFrame(data)

# Plotting the parallel coordinates
plt.figure(figsize=(8, 6))
pd.plotting.parallel_coordinates(df, 'Variable1', colormap='viridis
    ')

# Customize the plot
plt.title('Parallel Coordinate Plot')
plt.xlabel('Variables')
plt.ylabel('Value')
plt.legend(loc='upper right')

# Display the plot
plt.show()
```

Results:

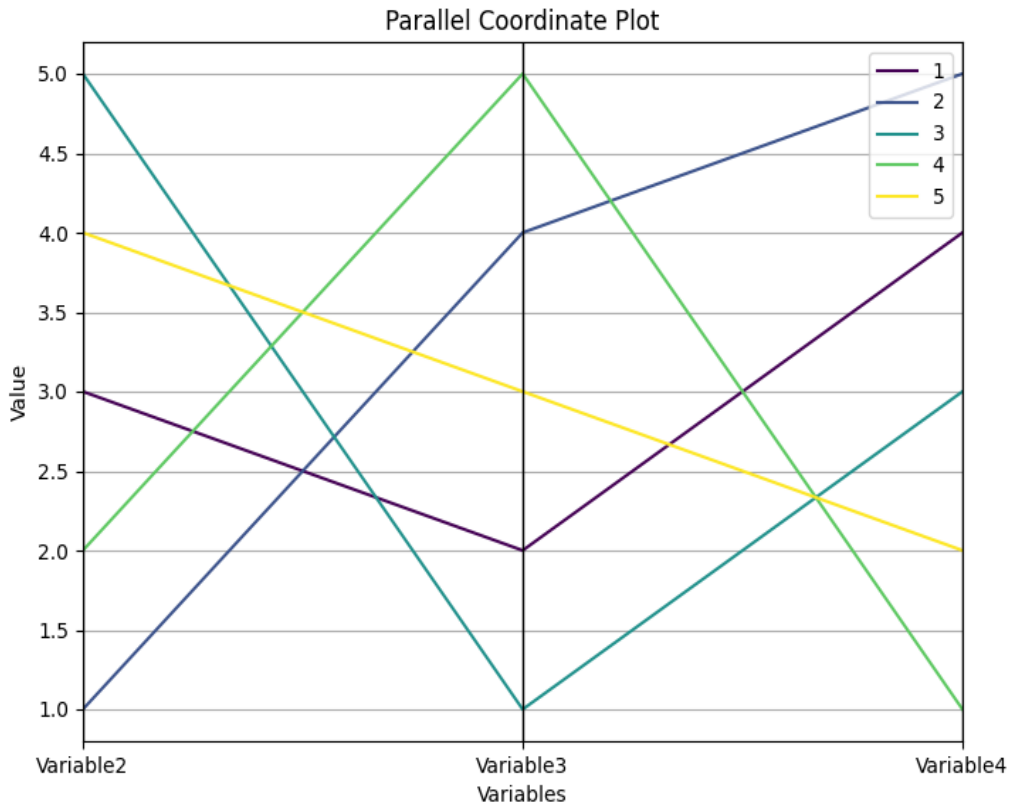

In this example, we create a pandas DataFrame df from the sample data dictionary. We then use pd.plotting.parallel_coordinates() to plot the parallel coordinate chart, passing the DataFrame df as the data and specifying the column 'Variable1' as the class column (optional). We also set the colormap to 'viridis' to assign different colors to the lines.

After plotting, we customize the plot by adding a title, x-label, y-label, and a legend. Finally, we display the plot using plt.show().

6.4 Sankey diagrams

A Sankey diagram is a type of flow diagram that visually represents the flow of quantities or values between different entities or stages. It illustrates the magnitude and direction of flow as well as the relationship between the entities involved. Sankey diagrams are particularly useful for showing the distribution, transfer, or transformation of resources, energy, or data.

The diagram consists of nodes (representing entities or categories) and directed links (representing flows). The width of the links is proportional to the quantity or value being visualized, allowing for quick comparison and understanding of relative magnitudes. The flow typically starts from a source node and ends at a destination node, with intermediate nodes representing stages or transitions along the flow path.

Sankey diagrams provide a clear visualization of how inputs are transformed and distributed across different pathways or processes. They help identify bottlenecks, inefficiencies, or imbalances in the flow and can be used to analyze and optimize systems or processes. Sankey diagrams are commonly used in fields such as energy management, environmental analysis, logistics, and data visualization to present complex flow data in an intuitive and informative way.

Overall, Sankey diagrams offer a powerful visual representation of the flow and allocation of resources, making it easier to understand and communicate complex relationships and patterns.

```
# Define the nodes
nodes = [
    dict(label='Node A'),  # Source node
    dict(label='Node B'),  # Intermediate node
    dict(label='Node C'),  # Intermediate node
    dict(label='Node D')   # Destination node
]

# Define the links
links = [
    dict(source=0, target=1, value=100),  # Flow from Node A to Node B with value 100
    dict(source=1, target=2, value=50),   # Flow from Node B to Node C with value 50
    dict(source=1, target=3, value=50),   # Flow from Node B to Node D with value 50
]

# Create the Sankey diagram figure
fig = go.Figure(data=[go.Sankey(
    node=dict(
        pad=15,   # Sets the padding of the nodes
        thickness=20,  # Sets the thickness of the nodes
        line=dict(color='black', width=0.5),  # Sets the color and width of the node borders
        label=nodes  # Assigns the node labels
    ),
    link=dict(
        source=[link['source'] for link in links],  # Sets the source nodes of the links
```

```
        target=[link['target'] for link in links],  # Sets the target nodes of the links
        value=[link['value'] for link in links]     # Sets the values of the links
    )
)])

# Customize the layout
fig.update_layout(title_text="Example Sankey Diagram",
                  font=dict(size=12, color='black'))

# Display the figure
fig.show()
```

Results:

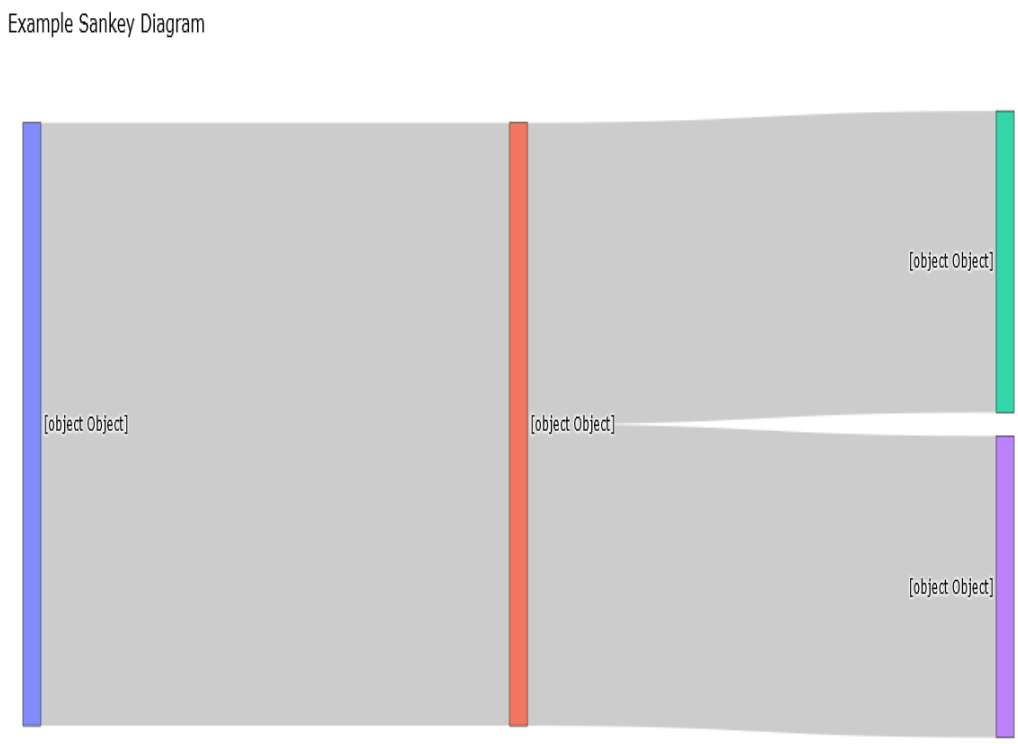

In this example, we create a simple Sankey diagram with four nodes (Node A, Node B, Node C, and Node D) and three links representing the flow of values between the nodes. You can customize the labels, colors, and other properties according to your specific requirements.

6.5 Force-directed graphs

Force-directed graphs, also known as force-directed layouts or spring embedders, are a type of visualization that represents relationships or connections between entities. They are commonly used to visualize networks, such as social networks, communication networks, or biological networks.

In a force-directed graph, each entity, often represented as a node or vertex, is connected to other entities through links or edges. The layout algorithm simulates a physical system where these nodes repel each other while connected nodes are drawn closer together. The goal is to find an arrangement of nodes that minimizes the total energy of the system.

The layout algorithm operates based on a set of forces:

1. Node-Node Repulsion: Nodes repel each other, creating an outward force that keeps them from overlapping. The strength of this force is often determined by factors like node size or distance.

2. Edge Attraction: Connected nodes exert an attractive force on each other, pulling them closer together. This force helps maintain the connectivity and structure of the network.

3. Gravity: An optional force that can be added to pull nodes towards a central point or to keep the graph balanced.

The algorithm iteratively calculates and adjusts the forces acting on each node until an equilibrium state is reached, resulting in a visually pleasing arrangement of nodes and edges. The nodes may settle into clusters or exhibit patterns based on the underlying relationships within the data.

Force-directed graphs provide an intuitive way to explore and understand complex networks. They can reveal important structural properties, such as central nodes, communities, or clusters. By adjusting parameters or applying additional visual encoding, attributes like node size, color, or label can be used to convey additional information, such as node importance or attributes.

Overall, force-directed graphs offer an effective means to visually represent relationships between entities and can aid in the analysis and interpretation of network data.

```python
import networkx as nx
import matplotlib.pyplot as plt

# Create an empty graph
graph = nx.Graph()

# Add nodes to the graph
graph.add_node("A")
graph.add_node("B")
graph.add_node("C")
graph.add_node("D")
graph.add_node("E")

# Add edges between nodes
graph.add_edge("A", "B")
graph.add_edge("B", "C")
graph.add_edge("C", "D")
```

```
graph.add_edge("D", "E")
graph.add_edge("E", "A")

# Calculate the layout using the force-directed algorithm
layout = nx.spring_layout(graph)

# Draw the graph
nx.draw_networkx(graph, pos=layout, with_labels=True, node_color='
    lightblue', edge_color='gray')

# Display the graph
plt.axis('off')
plt.show()
```

Results:

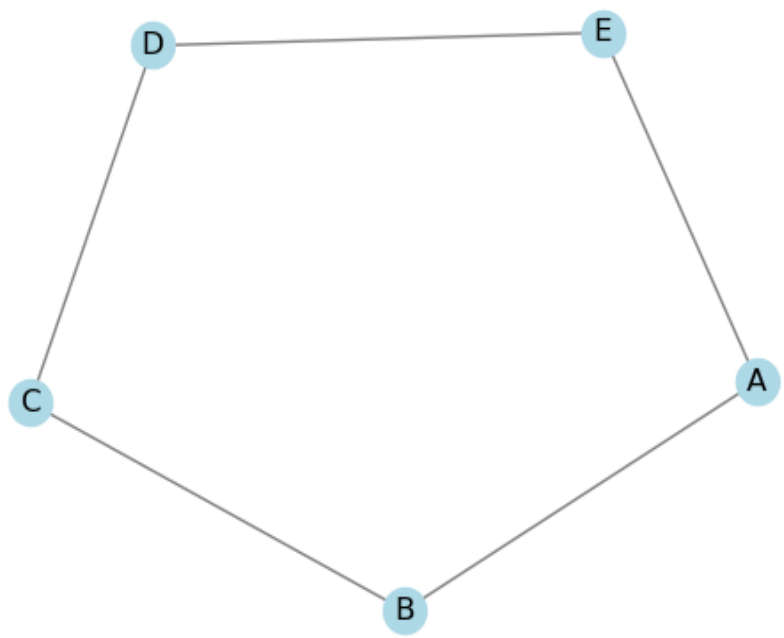

In this example, we start by importing the necessary libraries, NetworkX and Matplotlib. We create an empty graph and add nodes using the add_node function, specifying the node labels as strings. We then add edges between the nodes using the add_edge function.

Next, we calculate the layout of the graph using the spring_layout function

from NetworkX. This function applies the force-directed algorithm to position the nodes based on the connections between them.

Finally, we use the draw_networkx function to visualize the graph. We pass the graph object, the calculated layout, and additional parameters like node color and edge color. Then, we use plt.axis('off') to hide the axis and plt.show() to display the graph.

You can run this code to see a simple force-directed graph with five nodes and their connections. Feel free to modify the graph structure by adding or removing nodes and edges to create different visualizations.

6.6 Comparison

Scatter plots, correlation matrices, Sankey diagrams, parallel coordinate plots, and force-directed graphs are different data visualization techniques, each with its own set of pros and cons. Let's explore them one by one:

1. Scatter plots:

Pros:

- Visualizes the relationship between two continuous variables, helping identify patterns, trends, and correlations.
- Useful for identifying outliers or clusters in data.
- Easy to understand and interpret, suitable for presenting simple comparisons.

Cons:

- Limited to displaying two variables at a time, making it unsuitable for datasets with more dimensions.
- Not ideal for categorical or ordinal data.

2. Correlation matrices:

Pros:

- Provides an overview of the correlation between multiple variables in a single visual display.
- Helps identify strong positive and negative correlations between variables.
- Useful for identifying multicollinearity in regression analysis.

Cons:

- Limited to visualizing pairwise correlations and may become cluttered with a large number of variables.
- Doesn't provide information on the direction of the relationship or causality.

3. Sankey diagrams:

Pros:

- Ideal for displaying the flow of data or quantities between multiple categories or stages.
- Makes it easy to track changes over time or across different groups.
- Visually appealing and intuitive for showing proportions and comparisons.

Cons:

- More suitable for qualitative data visualization and flow representation than numerical data.
- May become complex and difficult to interpret when dealing with multiple categories or stages.

4. Parallel coordinate plots:
Pros:

- Allows the visualization of relationships among multiple variables simultaneously.
- Helpful in identifying patterns and clusters in high-dimensional data.
- Useful for comparing different instances or groups within a dataset.

Cons:

- Can become cluttered and hard to interpret with a large number of variables.
- Not suitable for categorical data or datasets with a small number of observations.

5. Force-directed graphs:
Pros:

- Useful for visualizing networks and relationships between interconnected entities.
- Provides insights into the structure and connectivity of complex systems.
- Helps identify central nodes and communities within a network.

Cons:

- Can become visually overwhelming and difficult to interpret for large and dense networks.
- May not be as effective for datasets with a limited number of connections.

Ultimately, the choice of visualization technique depends on the specific data you are working with and the insights you want to communicate. A combination of different visualization methods might be necessary to gain a comprehensive understanding of your data.

Chapter 7

To go further

7.1 load_iris study

The load_iris dataset is a popular toy dataset available in scikit-learn, a widely used machine learning library in Python. It is often used for practicing and testing various classification algorithms. The dataset contains measurements of iris flowers, which belong to three different species: setosa, versicolor, and virginica. Each sample in the dataset represents a different iris flower, and the dataset provides various features (also known as attributes or characteristics) that describe each flower.

The load_iris dataset is a dictionary-like object with the following components:

1. data: This is a 2D NumPy array containing the feature values for each iris sample. Each row represents a different iris flower, and each column corresponds to a specific feature. In the case of the load_iris dataset, there are four features for each flower: sepal length (in centimeters), sepal width (in centimeters), petal length (in centimeters), and petal width (in centimeters).

2. target: This is a 1D NumPy array that contains the target values, or in other words, the class labels for each iris sample. The class labels are encoded as integers, where 0 corresponds to the setosa species, 1 to the versicolor species, and 2 to the virginica species.

3. target_names: This is an array of strings that provides the names of the different classes (species) in the dataset. In this case, it contains the names "setosa", "versicolor", and "virginica".

4. DESCR: This is a string containing a brief description of the dataset. It provides information about the origin of the data, the number of samples and features, as well as the class distribution.

5. feature_names: This is an array of strings that provides the names of the different features in the dataset. In this case, it contains the names "sepal length (cm)", "sepal width (cm)", "petal length (cm)" and "petal width (cm)."

The load_iris dataset is a classic example used in many introductory machine

learning tutorials and courses due to its simplicity and well-defined classes. It serves as a good starting point for learning and practicing data analysis, data visualization, and classification algorithms in machine learning.

For the load_iris dataset, I would recommend using a scatter plot with color-coding for different classes. A scatter plot is a simple yet powerful visualization that can effectively display relationships and patterns between multiple variables, making it suitable for this dataset with four features.

Here's why a scatter plot is a good choice:

1. Feature Comparison: The load_iris dataset contains four features: sepal length, sepal width, petal length, and petal width. A scatter plot allows you to visualize the relationships between any two of these features simultaneously, helping to identify potential correlations or separations between classes.

2. Easy to Interpret: Scatter plots are easy to understand even for non-experts. Each data point represents an observation, and the position on the plot is determined by the values of two features. By using color to represent different classes of iris flowers, it becomes straightforward to see how the classes are distributed across the feature space.

3. Handling Multiclass Data: The load_iris dataset has three classes of iris flowers (setosa, versicolor, and virginica). Using different colors for each class allows you to distinguish them easily on the scatter plot. You can either use standard colors like red, green, and blue or choose a colormap that offers better contrast and differentiation.

4. Potential Outliers: Scatter plots help you identify any potential outliers in the dataset. Outliers are data points that significantly deviate from the overall pattern, and they can be critical in certain analyses or machine learning tasks.

To create the scatter plot, you can use Python's popular data visualization library, such as Matplotlib or Seaborn. Here's an example using Matplotlib:

```
import matplotlib.pyplot as plt
from sklearn.datasets import load_iris

# Load the iris dataset
iris = load_iris()
data = iris.data
target = iris.target

# Create a scatter plot with color-coded classes
plt.figure(figsize=(8, 6))
plt.scatter(data[:, 0], data[:, 1], c=target, cmap='viridis',
    edgecolors='k')
plt.xlabel('Sepal Length (cm)')
plt.ylabel('Sepal Width (cm)')
plt.title('Scatter Plot of Iris Dataset')
plt.colorbar(label='Class', ticks=[0, 1, 2], format=plt.
    FuncFormatter(lambda val, _: iris.target_names[val]))
plt.show()
```

Results:

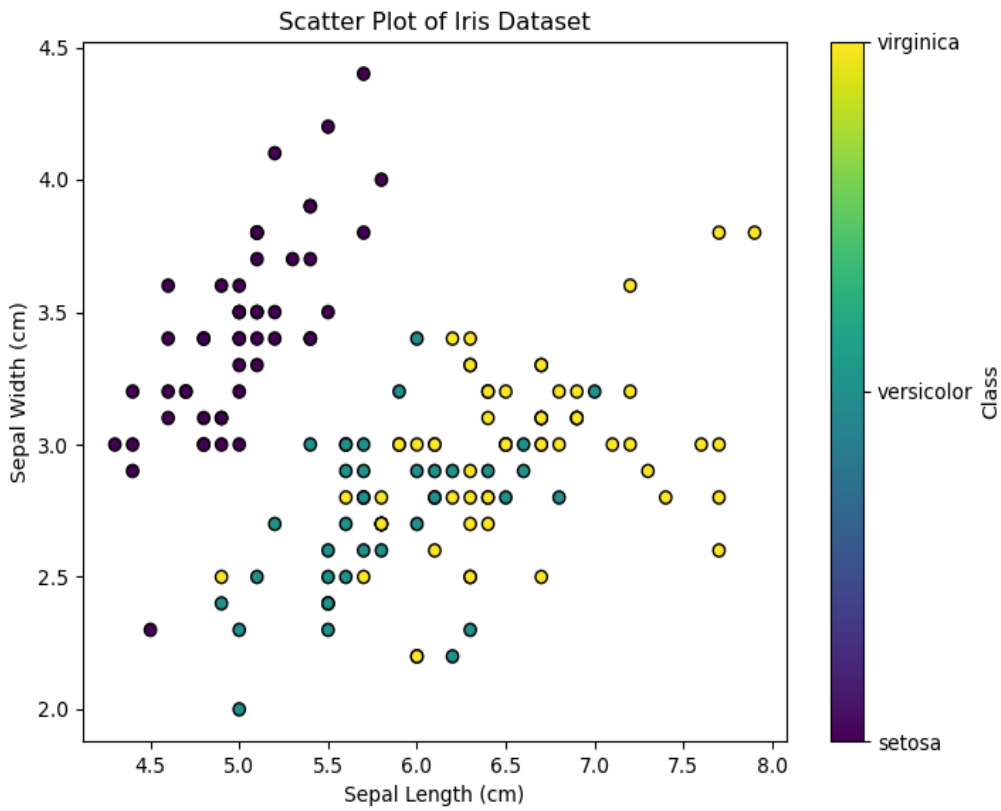

In this example, we used the first two features (sepal length and sepal width) for the scatter plot. You can modify the code to visualize other combinations of features or use different plots for more advanced analyses, but the scatter plot serves as a good starting point to understand the dataset's structure and relationships.

7.2 Good practices

Good practices in data visualization help ensure that your visual representations effectively communicate insights and information to your audience. Here are some key principles to keep in mind when creating data visualizations:

1. Know your audience: Understand who will be viewing your visualization and what they are looking to gain from it. Tailor the design and complexity to match the audience's knowledge and interests.

2. Choose the right chart type: Select a chart that best represents the relationships and patterns in your data. Common chart types include bar charts, line charts, scatter plots, pie charts, and heatmaps.

3. Simplify and declutter: Avoid unnecessary elements and minimize clutter in your visualizations. Each element should contribute to conveying the message clearly.

4. Use appropriate colors: Choose a color scheme that enhances understanding and doesn't distract from the data. Use colors consistently and purposefully to highlight important information.

5. Provide context: Include axis labels, titles, and legends to give context to your visualization and help users interpret the data correctly.

6. Highlight key insights: Use visual cues like annotations, callouts, and data labels to draw attention to important findings in your data.

7. Maintain consistency: Maintain a consistent style and format throughout your visualization to create a cohesive and professional look.

8. Use meaningful scales: Ensure that your axes and scales are appropriate and meaningful for the data being presented. Avoid misleading scaling that distorts the representation of data.

9. Keep it accessible: Ensure that your visualization is accessible to all users, including those with visual impairments. Provide alternative text for images and use patterns and textures in addition to colors to convey information.

10. Test and iterate: Review your visualization with colleagues or target users to gather feedback and make improvements. Iterative design helps create more effective visuals.

11. Avoid 3D effects: 3D effects can distort the perception of data and make it harder to interpret. Stick to 2D representations unless there's a compelling reason to use 3D.

12. Use proper data labels and units: Clearly label data points and use appropriate units for your measurements. Misleading labels can lead to confusion and misinterpretation.

13. Provide interactivity when necessary: Interactive elements can enhance user engagement and enable users to explore data further. However, ensure that interactivity adds value and doesn't overwhelm the visualization.

14. Tell a story: Organize your data visualization to tell a coherent and compelling story. Guide the viewer through the data to convey a clear message or insight.

Remember that good data visualization is not just about aesthetics; it's about effectively conveying information, insights, and patterns in the data in a

way that is easy to understand and interpret.

7.3 Usage of colors

Colors play a crucial role in data visualization for several reasons:

1. Data differentiation: Colors help distinguish different data categories or groups, making it easier for viewers to understand the patterns and relationships within the data. When data points are represented using different colors, it allows the audience to quickly recognize and interpret the information.

2. Highlighting patterns and trends: By using colors effectively, you can draw attention to specific data points, trends, or outliers. Color-coded visualizations make it easy to spot highs and lows, clusters, or other significant patterns in the data.

3. Enhancing comprehension: Colors aid in conveying complex information in a visually appealing and easily understandable manner. They can make large datasets more accessible, enabling viewers to comprehend the data quicker and better.

4. Facilitating comparison: When comparing multiple datasets or elements, colors provide a visual cue that aids in the understanding of relationships and contrasts between data points. This makes it easier to make data-driven decisions.

5. Emotional impact: Colors have psychological associations and can evoke emotions or convey specific meanings. By strategically using colors, data visualizations can create an emotional impact on the audience, making the information more memorable and engaging.

6. Accessibility and inclusivity: While using colors in data visualization is essential, it is also crucial to consider accessibility for color-blind individuals. Designing visualizations with color palettes that are distinguishable for people with various types of color blindness ensures inclusivity and broader comprehension.

7. Storytelling: Colors can help enhance the narrative aspect of data visualizations. By using a consistent color scheme throughout the visualization, you can reinforce the story you are trying to tell and guide the audience's attention to the most critical aspects of the data.

8. Brand identity: In some cases, data visualizations are used in reports, presentations, or dashboards associated with a particular brand or organization. Using brand colors can reinforce the identity and create a cohesive look and feel for the data presentation.

In summary, colors in data visualization not only make visualizations aesthetically appealing but also serve as powerful tools for data exploration, communication, and storytelling. Proper use of colors can greatly enhance the effectiveness and impact of data visualizations on the audience.

The choice of colors in data visualization depends on the specific context, the type of data being represented, and the goals of the visualization. Here are some general guidelines on when to use each color:

1. Categorical data:

- Use a different color for each category to distinguish between groups or

classes.

- Avoid using colors with similar hues for adjacent categories to prevent confusion.
- Use colors that are easily distinguishable, especially for color-blind individuals.

2. Sequential data (e.g., numerical data with a natural order, such as temperature):

- Use a sequential color scheme that transitions from one color to another to represent low to high values.
- Consider using a color scale with color intensity or saturation to indicate the magnitude of the data.

3. Diverging data (e.g., data with a midpoint or critical value, like positive and negative values):

- Use a diverging color scheme with a neutral color at the midpoint and different colors for positive and negative extremes.
- Ensure that the color choices effectively highlight the critical point and the divergence in the data.

4. Highlighting data points:

- Use contrasting colors to highlight specific data points, outliers, or important elements in the visualization.
- Colors like red or bright orange can draw attention to critical information.

5. Avoid using too many colors:

- Limit the number of colors used in a visualization to avoid overwhelming the audience.
- If dealing with a large number of categories or data points, consider grouping similar items and using a color palette with fewer distinct colors.

6. Color and context:

- Consider the context in which the visualization will be presented. For instance, a corporate report might require more conservative and brand-aligned colors, while an infographic could benefit from vibrant and attention-grabbing colors.

7. Accessibility and inclusivity:

- Ensure that the chosen colors are accessible to color-blind individuals.

- Test your color choices using color-blind simulation tools to ensure readability and distinction.

8. Avoid using color alone for critical information:

- In some cases, color may not be visible (e.g., when printed in grayscale or viewed on monochromatic displays). Always ensure that important information is also conveyed through labels, annotations, or other means.

In all cases, the key is to use colors purposefully and with a clear understanding of the underlying data and the message you want to convey. Harmonious color choices enhance the visualization's effectiveness, making it easier for the audience to interpret and act upon the information presented.

In data visualization, certain colors are more commonly used due to their effectiveness in conveying information and ensuring accessibility. Here are some of the frequently used colors and the reasons behind their popularity:

1. Blue: Blue is one of the most widely used colors in data visualization. It is often associated with trust, stability, and calmness. Blue is considered a safe choice for visualizations as it tends to be well-received by most people and works well in various contexts. It is commonly used to represent neutral or baseline data, making it suitable for background elements or less critical information.

2. Green: Green is often used to represent positive or good data points, growth, or success. It is associated with nature and health, making it a popular choice for visualizations related to environmental or health-related data.

3. Red: Red is frequently used to represent negative or critical data points, warnings, or alerts. It can draw immediate attention and is often used for highlighting important information or outliers.

4. Yellow: Yellow is used to represent caution or warning. It can be effective in drawing attention to specific elements, but it should be used sparingly due to its potential to cause eye strain or readability issues.

5. Orange: Orange is a warm color that is associated with energy and enthusiasm. It is often used to represent moderate values or to add contrast to blue-dominated visualizations.

6. Purple: Purple is associated with luxury, creativity, and sophistication. It is sometimes used for highlighting specific data points or as a secondary color in more complex visualizations.

7. Gray: Gray is commonly used for background elements, grids, or less important information. It provides a neutral and subdued backdrop that allows other colors to stand out.

8. White: White is often used for backgrounds or to create negative space in visualizations. It provides a clean and minimalist look, allowing the data to take center stage.

9. Black: Black is used sparingly for text, annotations, or to represent negative aspects. Its strong contrast can make it suitable for adding emphasis to specific elements.

The reasons these colors are more commonly used include their psychological associations, accessibility for most users, and their effectiveness in representing

different types of data and scenarios. However, it's essential to remember that the best color choices depend on the specific data, the intended message, and the target audience. Additionally, adhering to color theory principles and considering accessibility for color-blind users is crucial in creating effective and inclusive data visualizations.

7.4 3D visualization

3D data visualization is a powerful technique used to represent data in three-dimensional space, providing a more immersive and intuitive experience for data exploration and analysis. Unlike traditional 2D visualizations, which are limited to a flat plane, 3D data visualization allows for the representation of complex data sets with additional depth and perspective, making it easier to identify patterns, trends, and relationships within the data.

Here are some key points and benefits of 3D data visualization:

1. Enhanced understanding: By adding the third dimension, 3D visualizations can provide a better understanding of the data, especially when dealing with multidimensional data sets. It allows users to perceive data from various angles and perspectives, leading to deeper insights.

2. Improved spatial perception: 3D visualizations are particularly useful when working with spatial data, such as geographical data, molecular structures, architectural designs, or simulations. The depth provided by the third dimension helps users grasp the spatial relationships more accurately.

3. Interactivity and exploration: 3D visualizations often come with interactive features, enabling users to manipulate the visualization, zoom, rotate, and pan to explore the data from different viewpoints. This interactivity enhances the user experience and facilitates better data analysis.

4. Communication and presentation: 3D data visualizations can be visually engaging and captivating, making them valuable tools for presenting complex information to non-technical audiences. They can effectively communicate insights, trends, and findings in a more compelling manner.

5. Identification of outliers and anomalies: The additional dimension in 3D visualization can make it easier to identify outliers or anomalies that might not be apparent in 2D representations. This can be particularly useful in fields like finance, engineering, and medical research.

6. Integration with Virtual Reality (VR) and Augmented Reality (AR): As VR and AR technologies continue to advance, 3D data visualization can be seamlessly integrated into these platforms, providing even more immersive and interactive data exploration experiences.

However, it's essential to be cautious with the use of 3D data visualization. While it offers benefits in certain contexts, not all data sets are suitable for 3D representation. In some cases, a 2D visualization might be more effective and less prone to distortions or misinterpretations.

Overall, 3D data visualization is a valuable tool for understanding complex data sets, improving data exploration, and presenting information in a more engaging manner. Its potential continues to grow as technology advances and more sophisticated techniques for interactive 3D visualization are developed.

```
import numpy as np
import matplotlib.pyplot as plt
from mpl_toolkits.mplot3d import Axes3D

# Generate random 3D data points
np.random.seed(42)
```

```
num_points = 100
x = np.random.rand(num_points)
y = np.random.rand(num_points)
z = np.random.rand(num_points)

# Create a 3D scatter plot
fig = plt.figure()
ax = fig.add_subplot(111, projection='3d')

ax.scatter(x, y, z, c='b', marker='o', label='Data Points')

ax.set_xlabel('X-axis')
ax.set_ylabel('Y-axis')
ax.set_zlabel('Z-axis')
ax.set_title('3D Scatter Plot')

plt.legend()
plt.show()
```

Results:

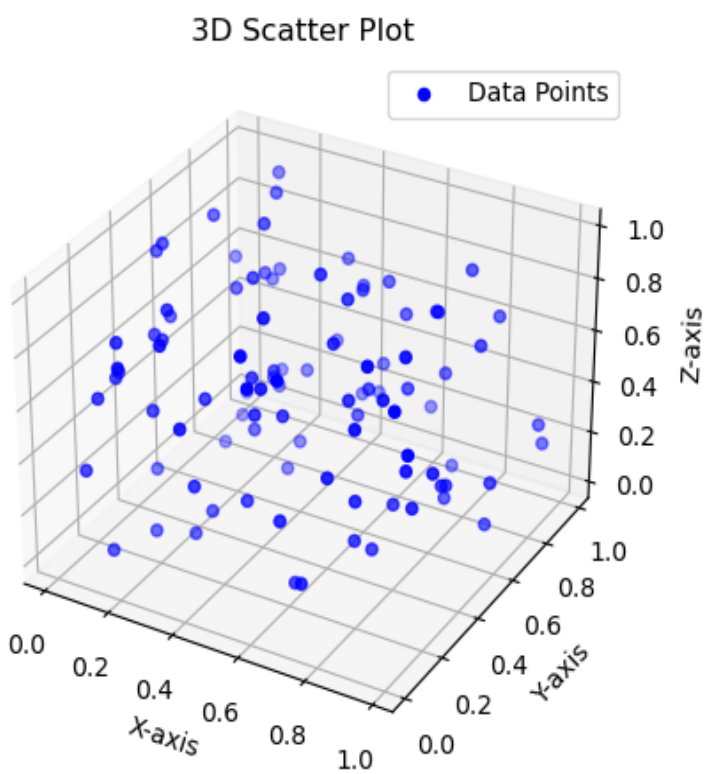

In this example, we use NumPy to generate random data points for the x, y,

and z coordinates. The scatter() function from Matplotlib's 3D plotting toolkit (mpl_toolkits.mplot3d) is used to create the 3D scatter plot. The data points are represented by blue spheres ('o' marker), and the labels for the axes and title are added to enhance the visualization.

When you run the code, a 3D scatter plot window will pop up, showing the random data points in 3D space. You can interact with the plot, rotate it, zoom in/out, and explore the data from different angles using the mouse.

Chapter 8

Conclusion

As we reach the end of the book, I hope you now see the world through a different lens—a lens that transforms data into stories, numbers into understanding, and complexity into clarity. The journey you've undertaken through the art and science of data visualization is not just a passive reading experience; it's an invitation to embark on a lifelong adventure.

Throughout this book, we've explored the fundamental principles and practical techniques that make data visualization a powerful tool for communication and decision-making. You've gained the skills and knowledge needed to wield data as a force for positive change.

But remember, the journey doesn't end here. In fact, it's only just beginning. As you close this book, I encourage you to embrace your newfound abilities and use them to confront the challenges and opportunities that lie ahead. Whether you're analyzing business data, advocating for social change, or seeking to understand the world around you, data visualization will be your ally, illuminating the path forward.

Never forget the fundamental truth that data is not just cold numbers on a spreadsheet; it's the embodiment of human experiences, aspirations, and endeavors. By visualizing data, you're not only making sense of the world but also sharing its stories with others. In this way, you become a storyteller, a translator, and a catalyst for informed decision-making.

As you continue your journey in the realm of data visualization, always keep in mind the principles of clarity, simplicity, and empathy. Seek to engage your audience, whether it's your colleagues, your community, or the world at large, and empower them with the knowledge and insights you've gleaned.

In the ever-evolving landscape of data and technology, remember that your skills can make a difference. Embrace new tools and technologies, stay curious, and adapt to the changing data visualization landscape. By doing so, you'll remain at the forefront of a field that has the power to transform industries, influence policies, and shape our collective future.

Thank you for joining me on this journey. I'm confident that armed with the knowledge and passion for data visualization, you are well-prepared to not

only navigate the data-rich world we live in but also to leave your own mark by uncovering stories, driving change, and making a lasting impact. So, go forth, visualize, and let your data-powered insights illuminate the way forward.

Chapter 9

About the author

Hello! I am Alexis Carbillet, a graduate from the Artificial Intelligence program at IMT Mines Alès who is passionate about data. I am currently working at OVHcloud and on different side projects such as my blogs. You can find them on my website

Thank you for reading this book. I sincerely hope it was usefull to you.

Else you can simply use this QR code: